Phase 5.1 Watershed Model

Map Basin 1. Upper Susquehanna

Calibration Stations, Reaches, and River Segmentation

Chesapeake Bay Program
A Watershed Partnership

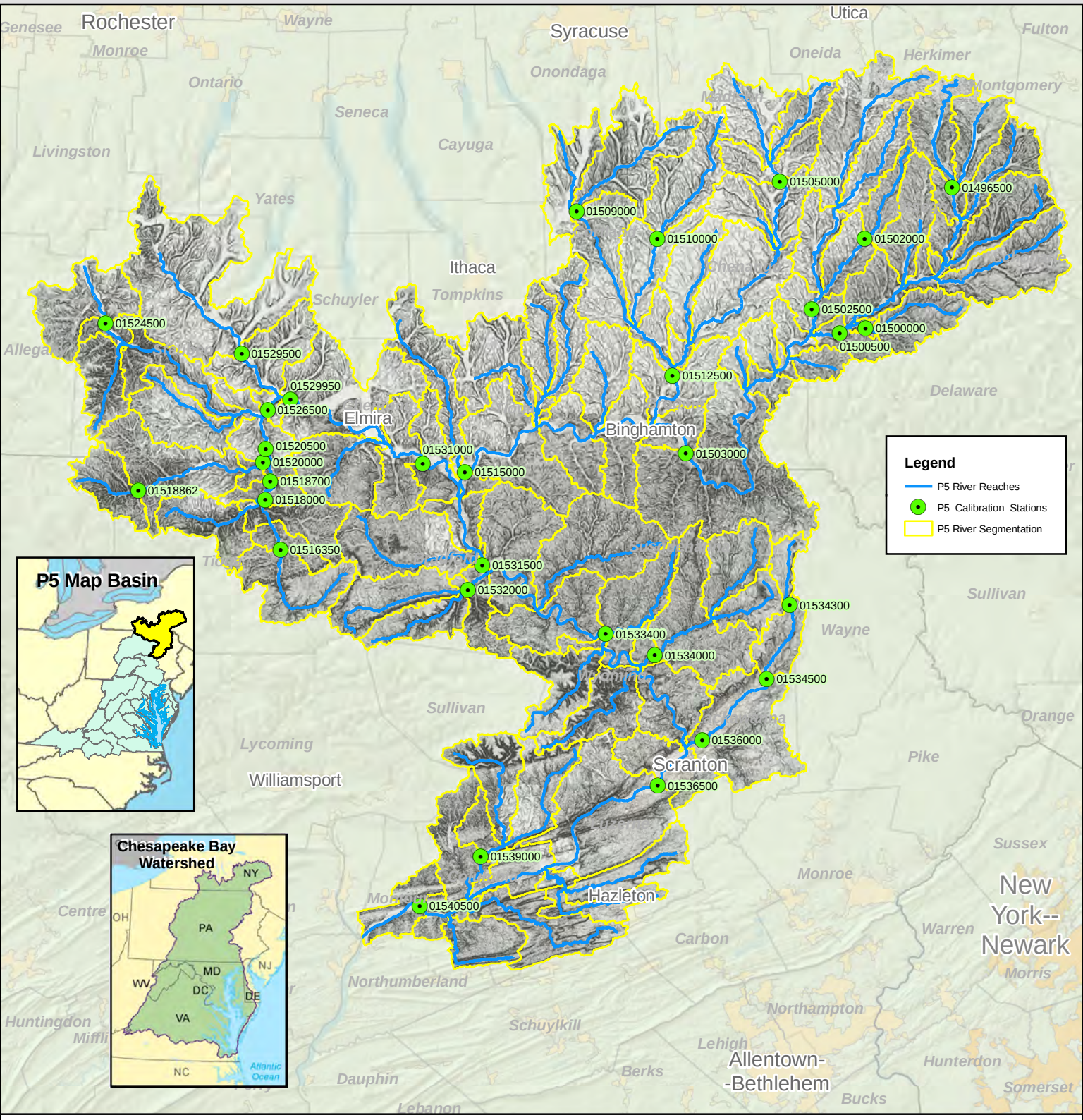

Data Sources: Chesapeake Bay Program

For more information, visit *www.chesapeakebay.net*
Disclaimer: *www.chesapeakebay.net/termsofuse.htm*

0 185 370 740 Kilometers
0 150 300 600 Miles
N

Created by KJH, 9/11/08

UTM Zone 18N, NAD 83

Phase 5.1 Watershed Model

Map Basin 1. Upper Susquehanna

Phase 5.1 Base Land Cover (2000)

Chesapeake Bay Program
A Watershed Partnership

Data Sources: Chesapeake Bay Program

For more information, visit *www.chesapeakebay.net*
Disclaimer: *www.chesapeakebay.net/termsofuse.htm*

0 187.5 375 750 Kilometers

0 150 300 600 Miles

N

Created by KJH, 7/30/08

UTM Zone 18N, NAD 83

Phase 5.1 Watershed Model

Map Basin 2. West Branch, Susquehanna

Calibration Stations, Reaches, and River Segmentation

Chesapeake Bay Program
A Watershed Partnership

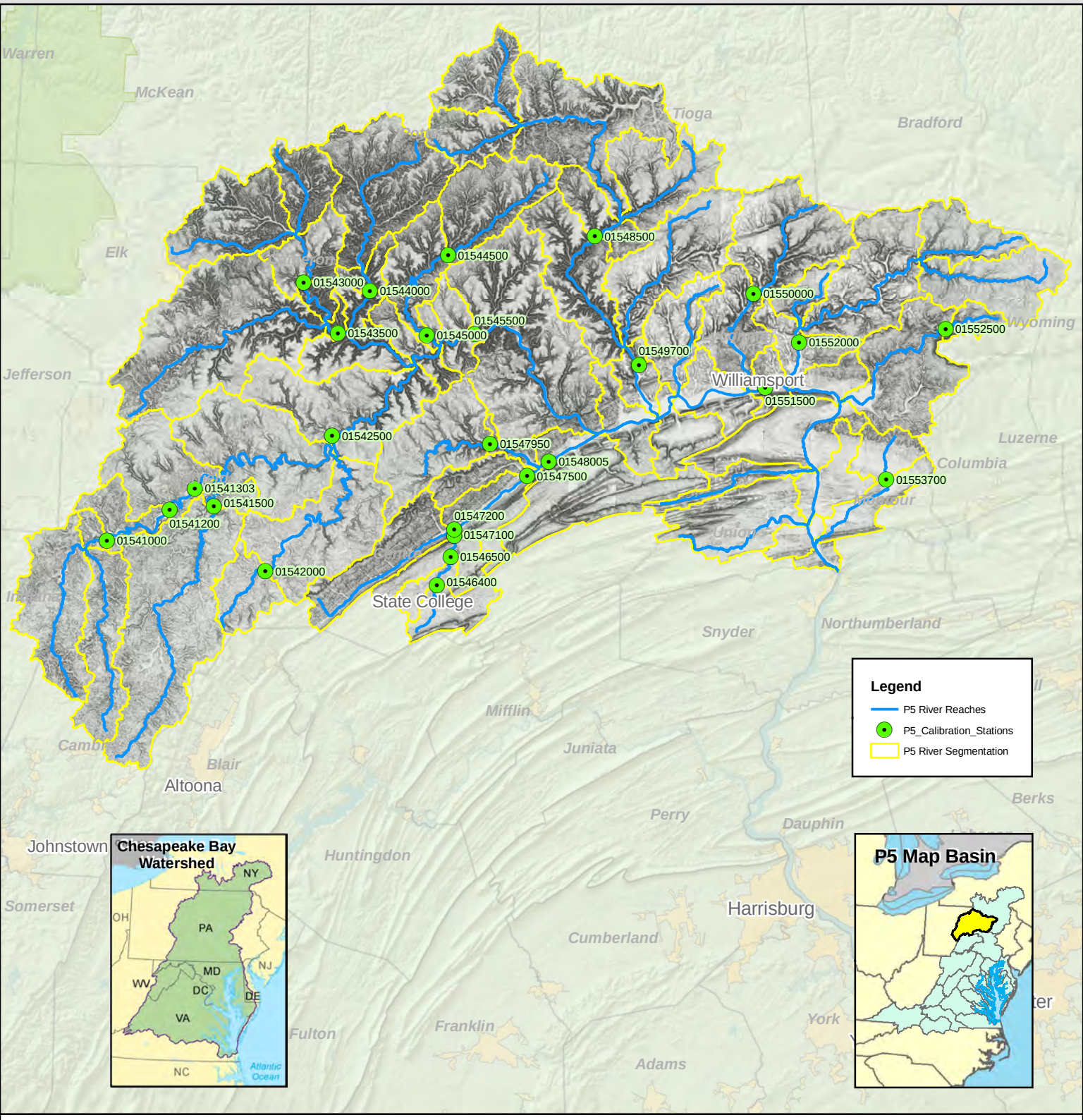

Data Sources: Chesapeake Bay Program

For more information, visit *www.chesapeakebay.net*
Disclaimer: *www.chesapeakebay.net/termsofuse.htm*

0 190 380 760 Kilometers
0 150 300 600 Miles
N

Created by KJH, 9/11/08

UTM Zone 18N, NAD 83

Phase 5.1 Watershed Model

Map Basin 2. West Branch, Susquehanna

Phase 5.1 Base Land Cover (2000)

Chesapeake Bay Program
A Watershed Partnership

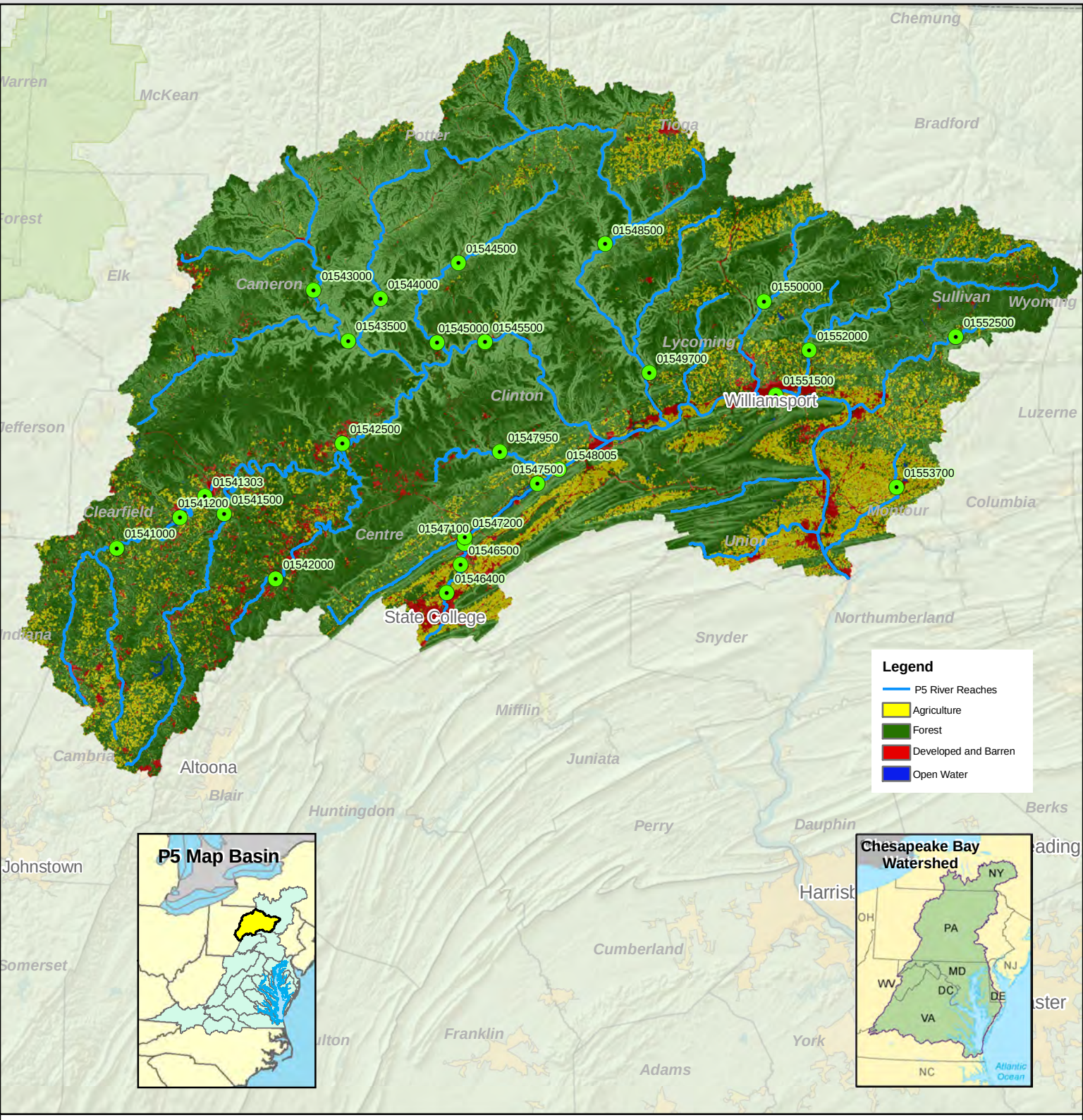

Data Sources: Chesapeake Bay Program

For more information, visit *www.chesapeakebay.net*
Disclaimer: *www.chesapeakebay.net/termsofuse.htm*

0 185 370 740 Kilometers
0 150 300 600 Miles
N

Phase 5.1 Watershed Model

Map Basin 3. Juniata River

Calibration Stations, Reaches, and River Segmentation

Chesapeake Bay Program
A Watershed Partnership

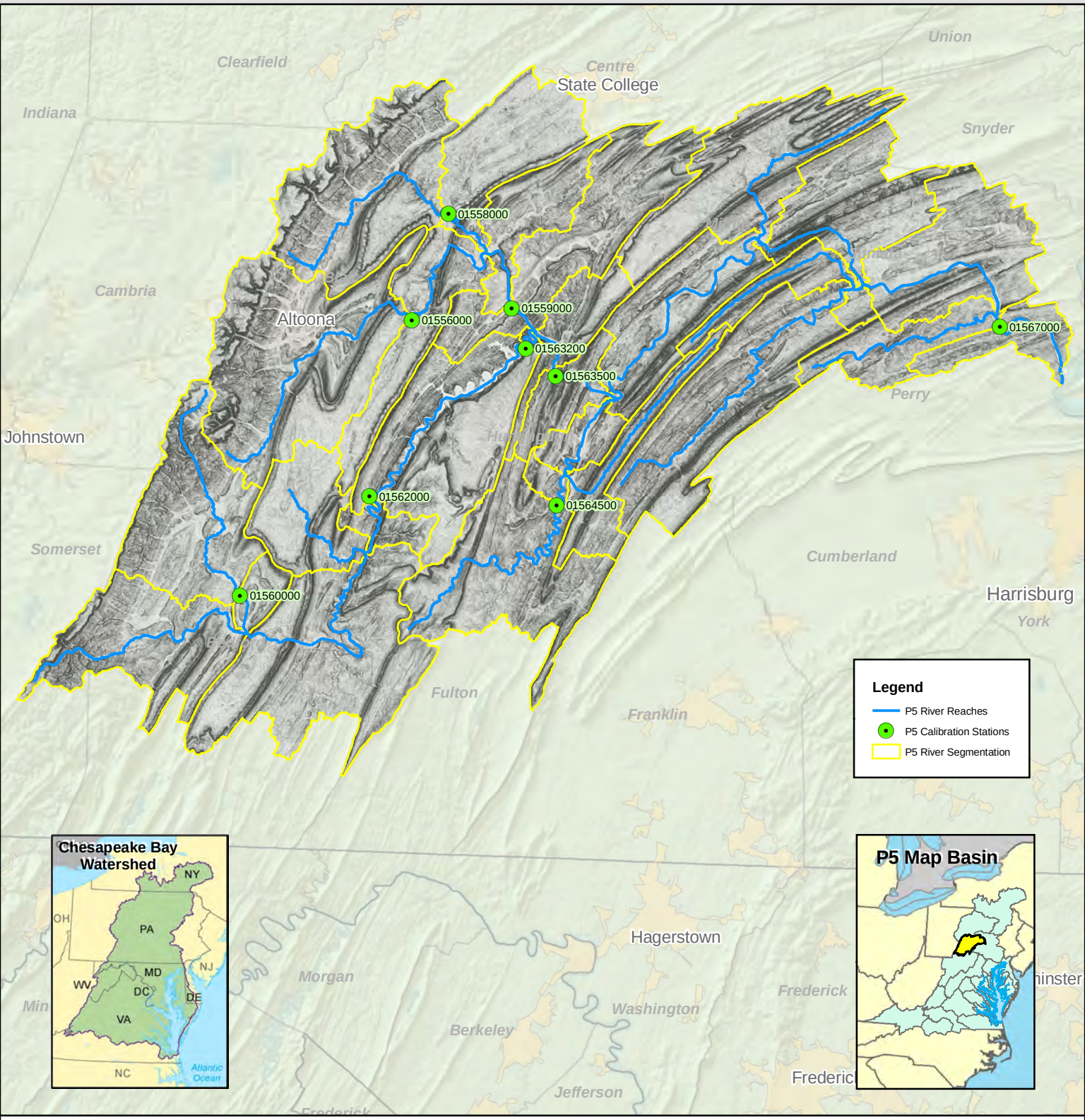

Data Sources: Chesapeake Bay Program

For more information, visit *www.chesapeakebay.net*
Disclaimer: *www.chesapeakebay.net/termsofuse.htm*

0 190 380 760 Kilometers
0 150 300 600 Miles
N

Created by KJH, 9/11/08

UTM Zone 18N, NAD 83

Phase 5.1 Watershed Model

Map Basin 3. Juniata River

Phase 5.1 Base Land Cover (2000)

Chesapeake Bay Program
A Watershed Partnership

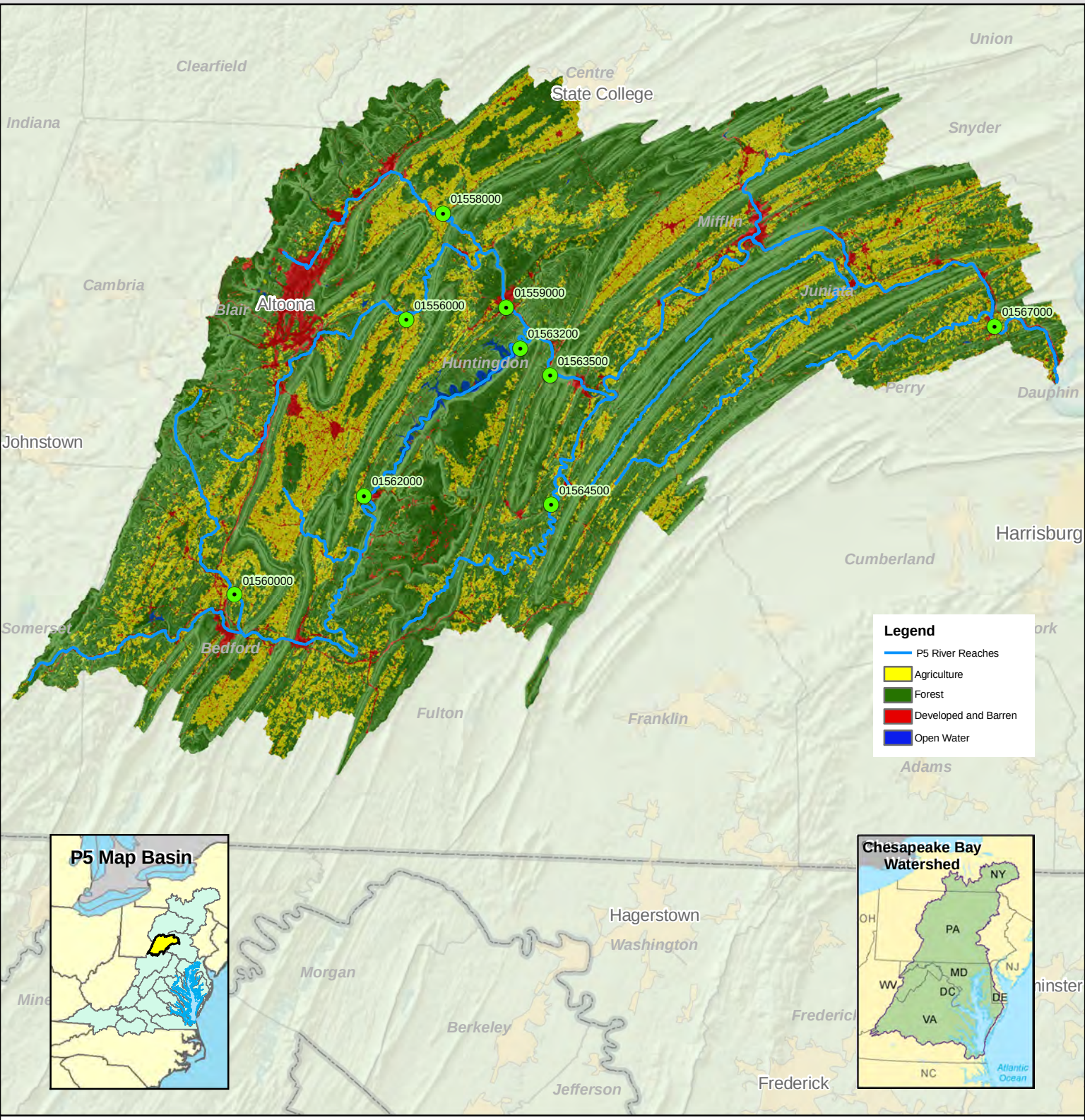

Data Sources: Chesapeake Bay Program

For more information, visit *www.chesapeakebay.net*
Disclaimer: *www.chesapeakebay.net/termsofuse.htm*

0 185 370 740 Kilometers
0 150 300 600 Miles
N

Created by KJH and JG, 9/23/08

UTM Zone 18N, NAD 83

Phase 5.1 Watershed Model

Map Basin 4: Lower Susquehanna River

Calibration Stations, Reaches, and River Segmentation

Chesapeake Bay Program
A Watershed Partnership

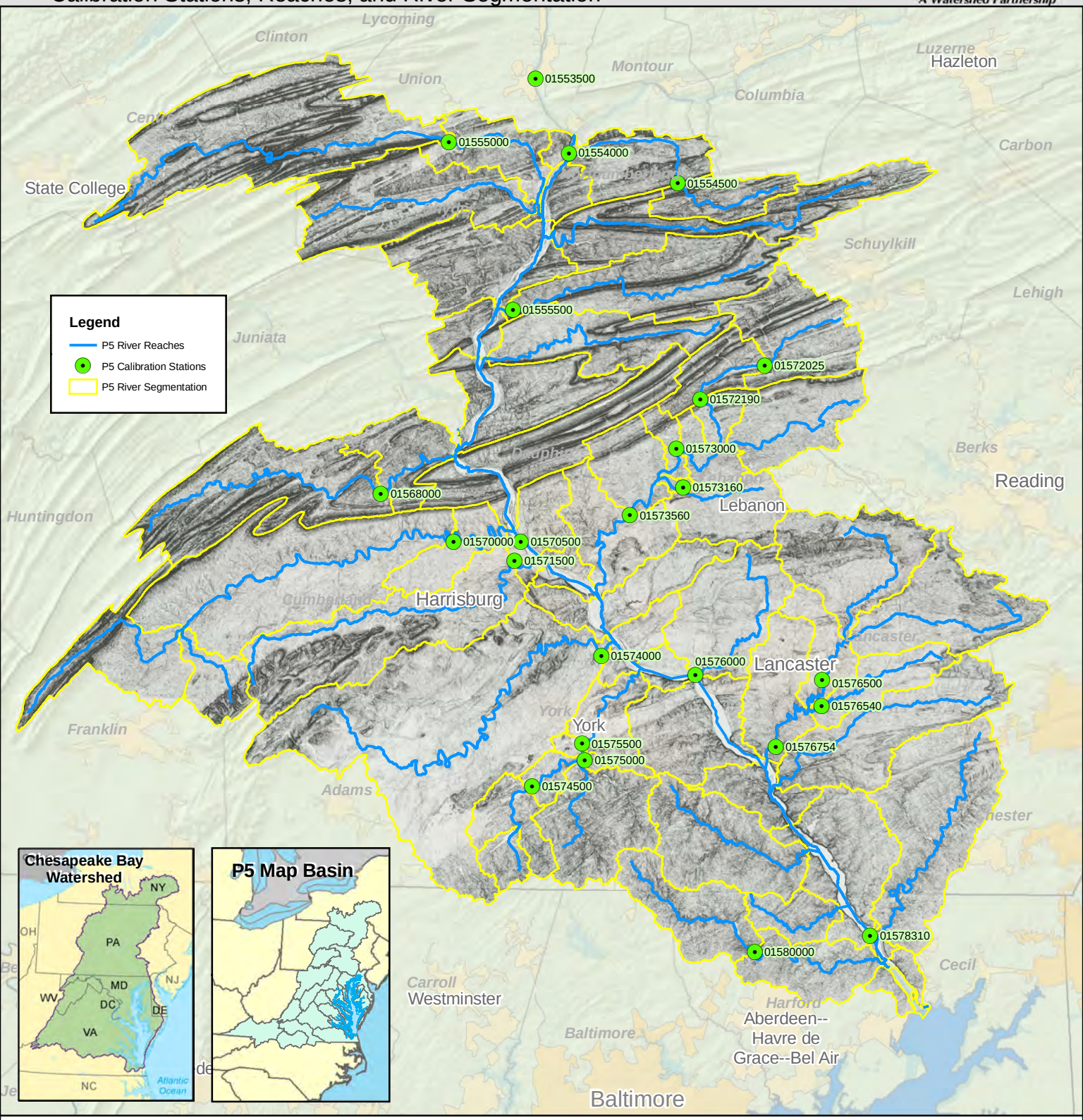

Data Sources: Chesapeake Bay Program

For more information, visit *www.chesapeakebay.net*
Disclaimer: *www.chesapeakebay.net/termsofuse.htm*

0 162.5 325 650 Kilometers
0 150 300 600 Miles
N

Created by KJH and JG, 9/17/08

UTM Zone 18N, NAD 83

Phase 5.1 Watershed Model

Map Basin 4. Lower Susquehanna
Phase 5.1 Base Land Cover (2000)

Chesapeake Bay Program
A Watershed Partnership

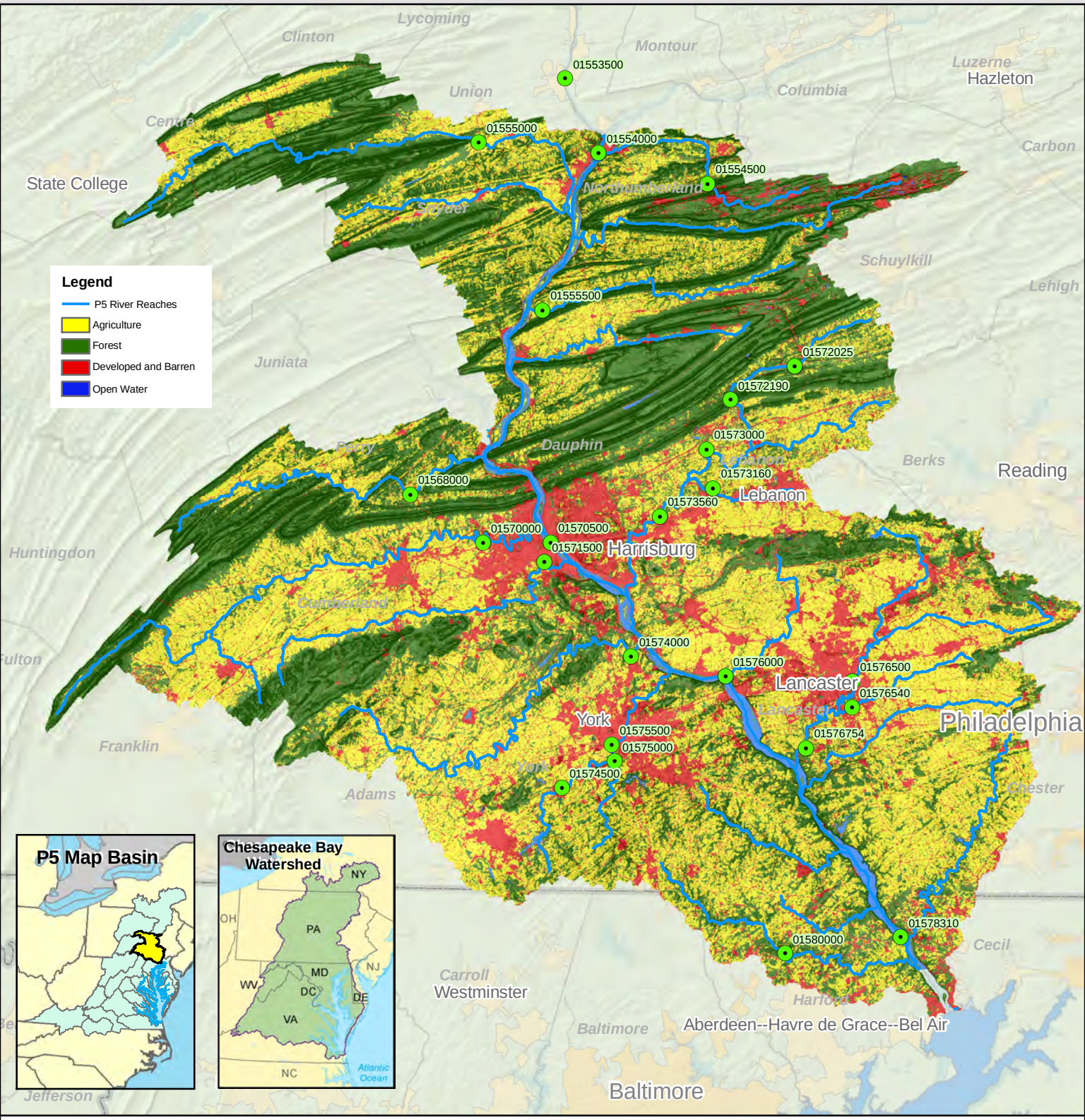

Data Sources: Chesapeake Bay Program

For more information, visit *www.chesapeakebay.net*
Disclaimer: *www.chesapeakebay.net/termsofuse.htm*

0 185 370 740 Kilometers
0 150 300 600 Miles
N

Created by KJH and JG, 9/23/08

UTM Zone 18N, NAD 83

Phase 5.1 Watershed Model

Map Basin 5: The Youghiogheny and Upper Potomac Rivers

Calibration Stations, Reaches, and River Segmentation

Chesapeake Bay Program
A Watershed Partnership

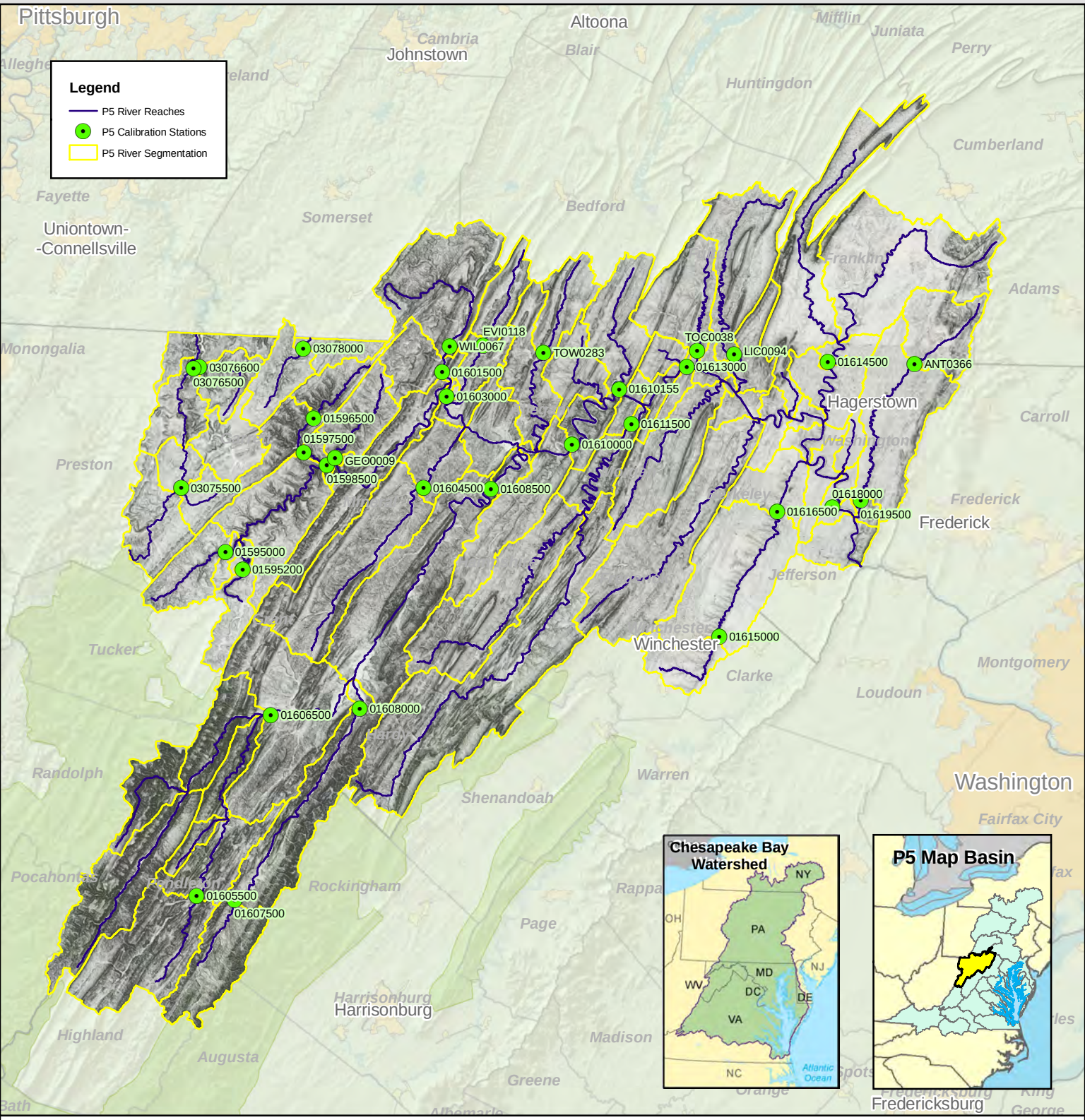

Data Sources: Chesapeake Bay Program

For more information, visit *www.chesapeakebay.net*
Disclaimer: *www.chesapeakebay.net/termsofuse.htm*

0 162.5 325 650 Kilometers

0 150 300 600 Miles

N

Created by KJH and JG, 9/17/08

UTM Zone 18N, NAD 83

Phase 5.1 Watershed Model

Map Basin 5: The Youghiogheny and Upper Potomac Rivers
Phase 5.1 Base Land Cover (2000)

Chesapeake Bay Program
A Watershed Partnership

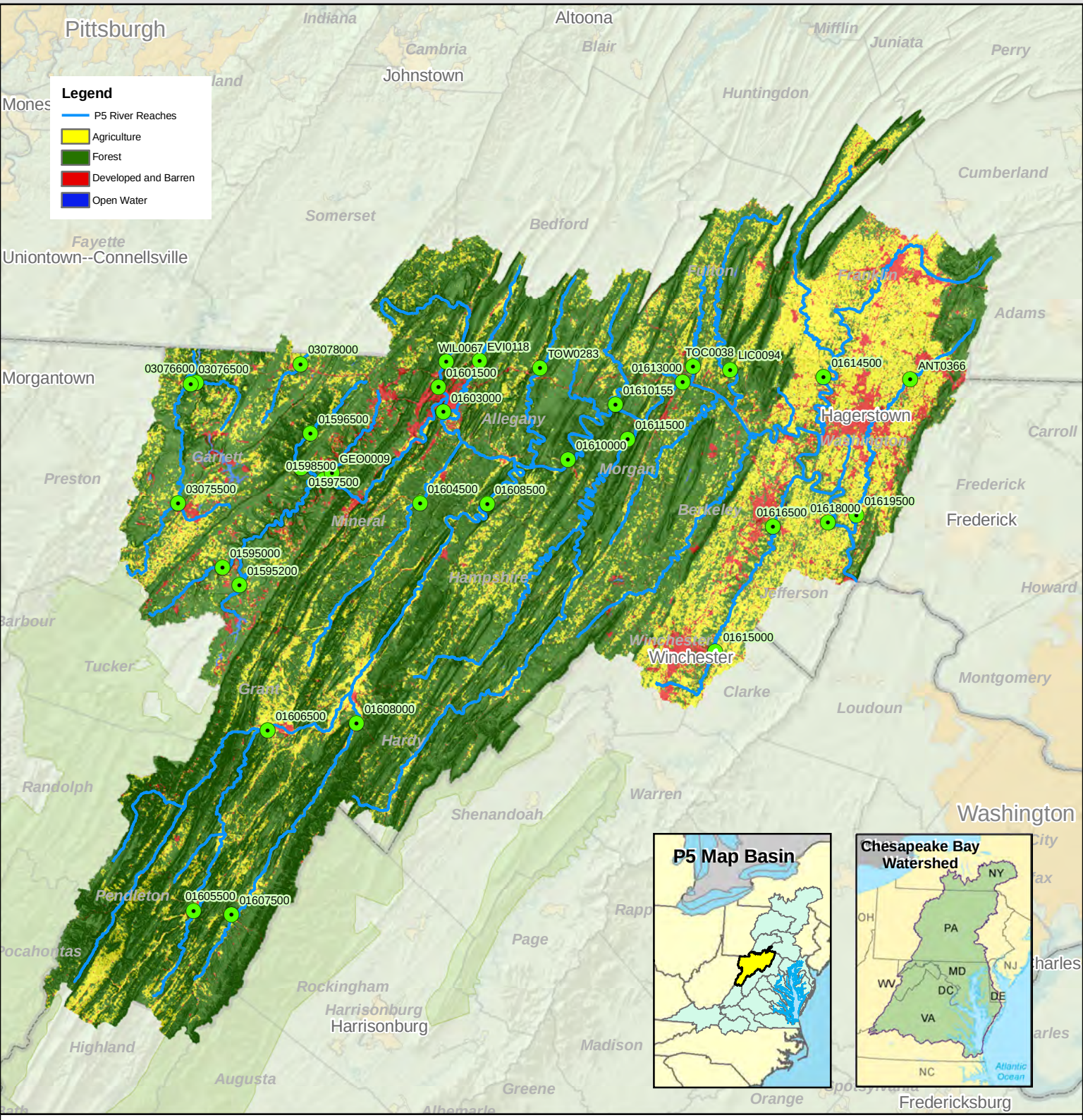

Data Sources: Chesapeake Bay Program

For more information, visit *www.chesapeakebay.net*
Disclaimer: *www.chesapeakebay.net/termsofuse.htm*

0 187.5 375 750 Kilometers
0 150 300 600 Miles
N

Created by KJH and JG, 9/23/08

UTM Zone 18N, NAD 83

Phase 5.1 Watershed Model

Map Basin 6: The Middle Potomac, Monocacy and Shenandoah Rivers

Calibration Stations, Reaches, and River Segmentation

Chesapeake Bay Program
A Watershed Partnership

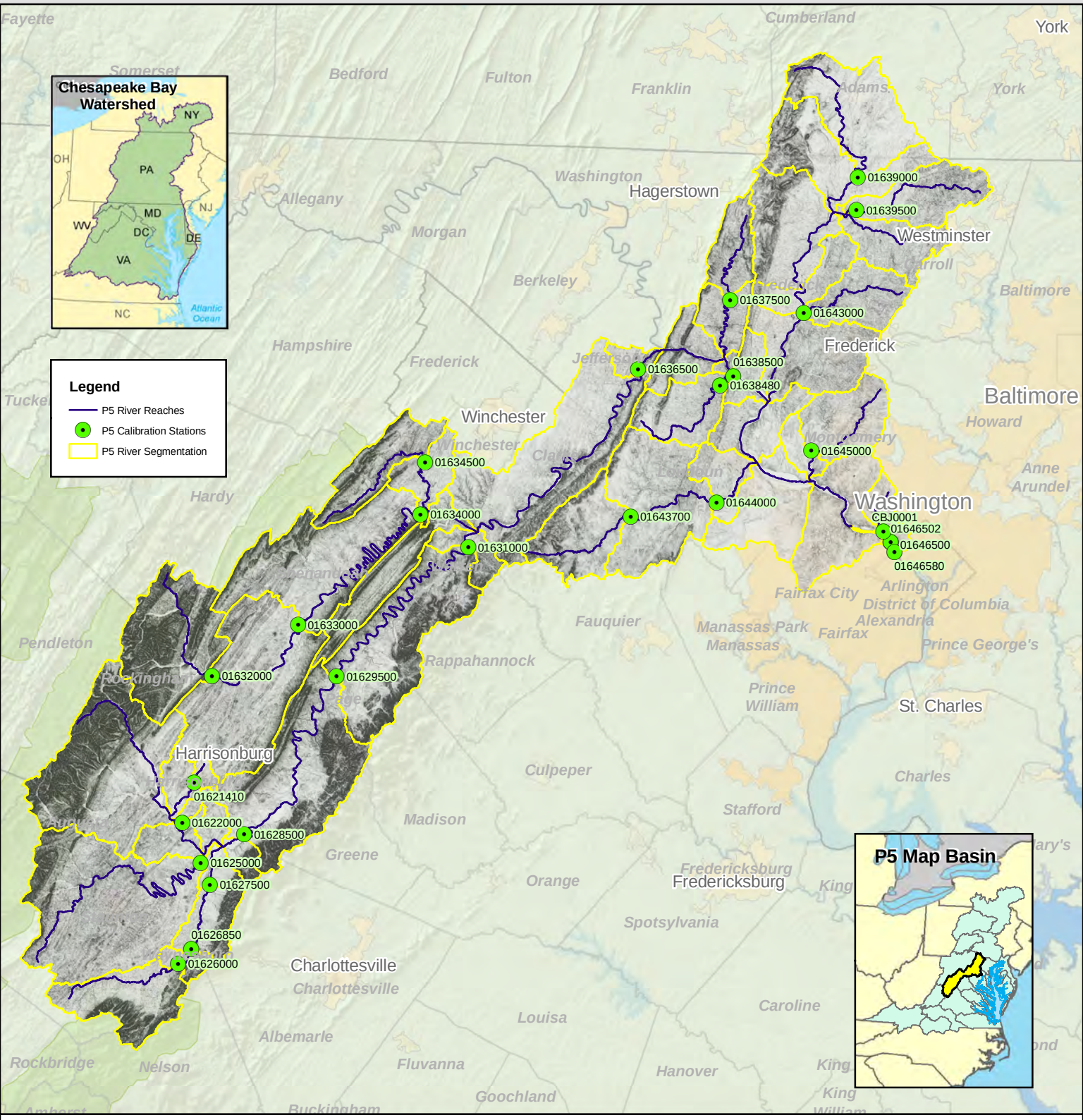

Data Sources: Chesapeake Bay Program

For more information, visit *www.chesapeakebay.net*
Disclaimer: *www.chesapeakebay.net/termsofuse.htm*

0 160 320 640 Kilometers
0 150 300 600 Miles
N

Created by KJH and JG, 9/17/08

UTM Zone 18N, NAD 83

Phase 5.1 Watershed Model

Map Basin 6: The Middle Potomac, Monocacy and Shenandoah Rivers
Phase 5.1 Base Land Cover (2000)

Chesapeake Bay Program
A Watershed Partnership

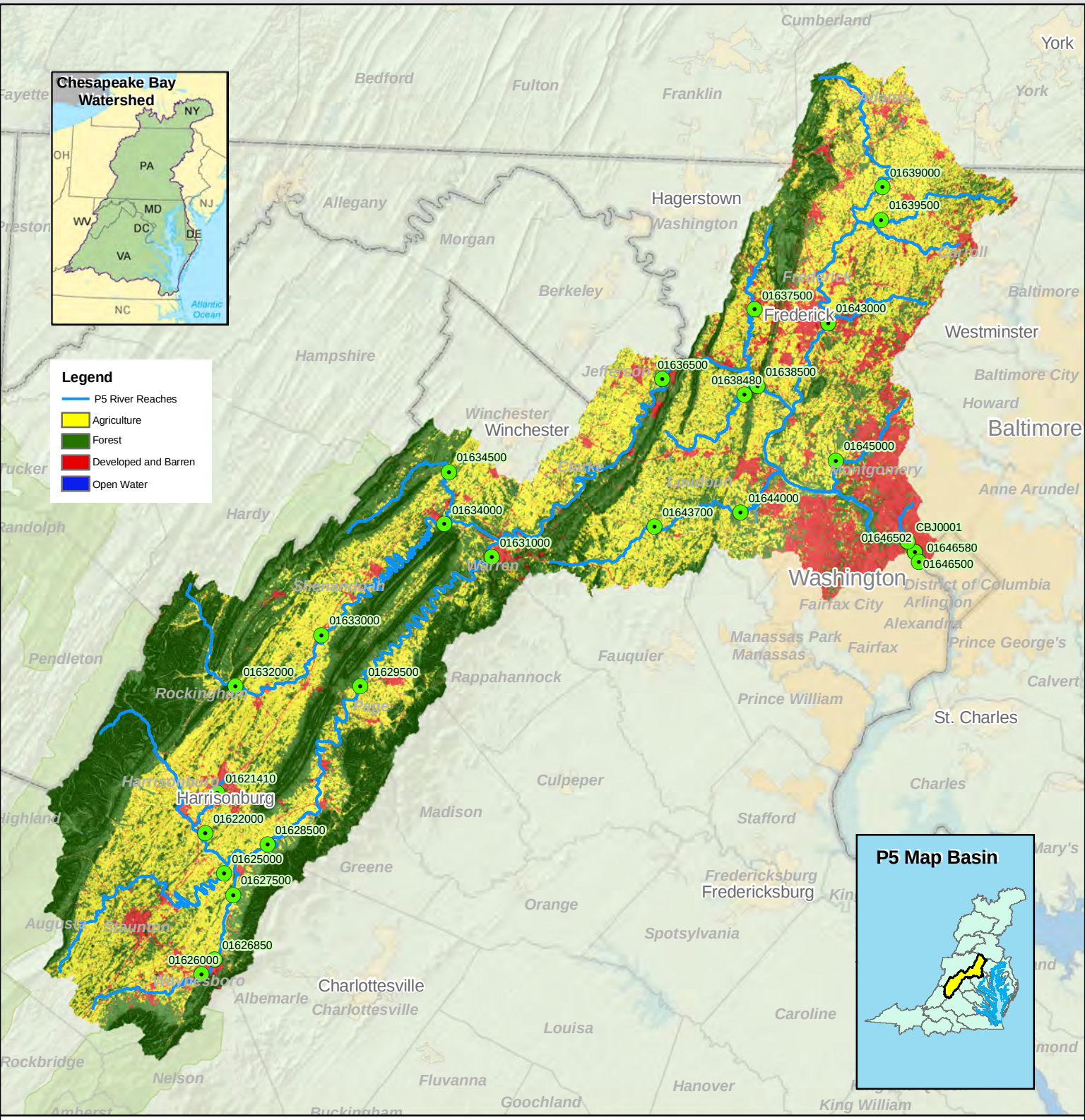

Data Sources: Chesapeake Bay Program

For more information, visit *www.chesapeakebay.net*
Disclaimer: *www.chesapeakebay.net/termsofuse.htm*

0 187.5 375 750 Kilometers
0 150 300 600 Miles
N

Created by KJH and JG, 9/23/08

UTM Zone 18N, NAD 83

Phase 5.1 Watershed Model

Map Basin 7. Lower Potomac and Patuxent Rivers

Calibration Stations, Reaches, and River Segmentation

Chesapeake Bay Program
A Watershed Partnership

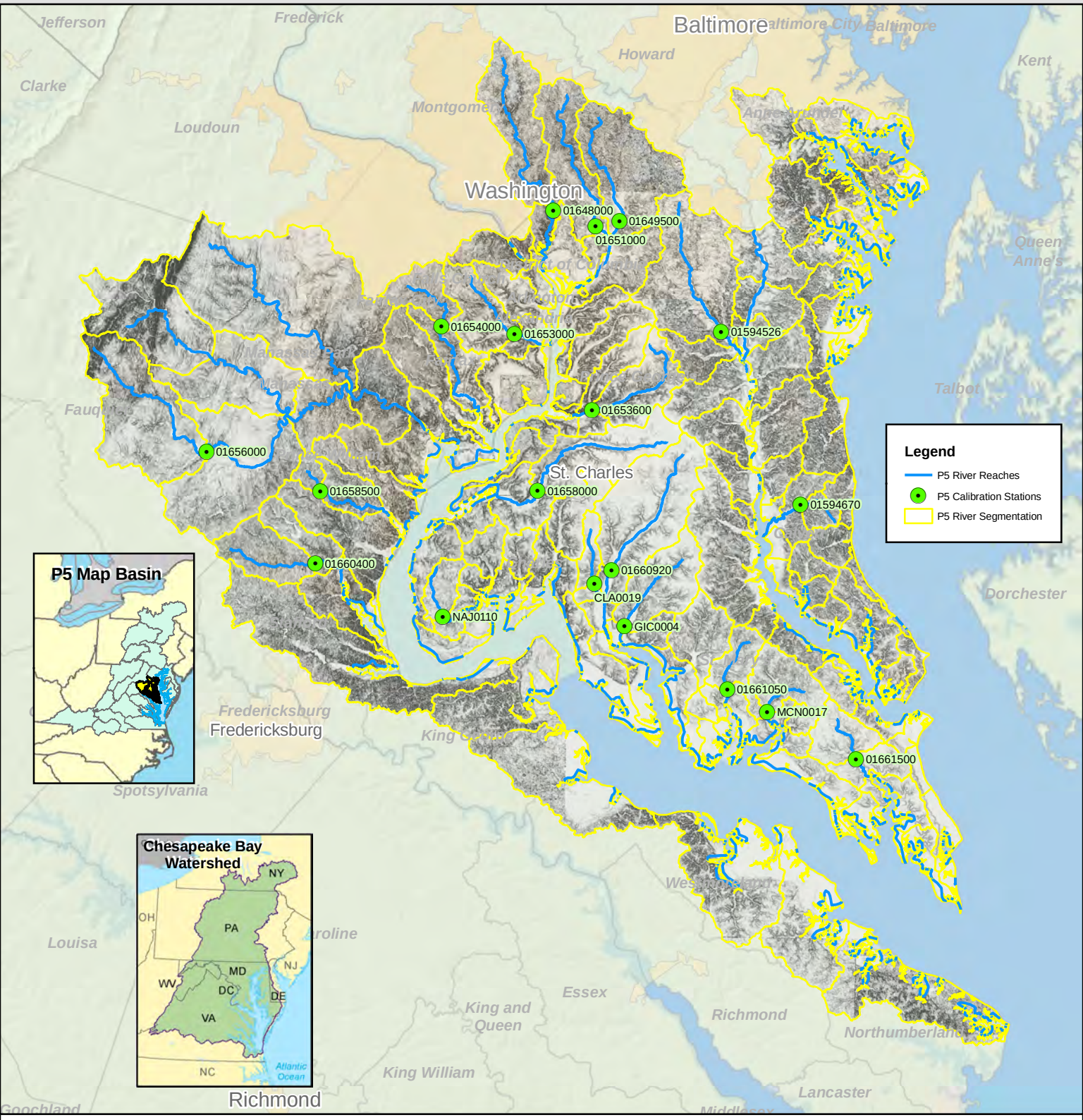

Data Sources: Chesapeake Bay Program

For more information, visit *www.chesapeakebay.net*
Disclaimer: *www.chesapeakebay.net/termsofuse.htm*

0 205 410 820 Kilometers
0 160 320 640 Miles
N

Created by KJH and JG, 9/17/08

UTM Zone 18N, NAD 83

Phase 5.1 Watershed Model

Map Basin 8. Upper James River

Calibration Stations, Reaches, and River Segmentation

Chesapeake Bay Program
A Watershed Partnership

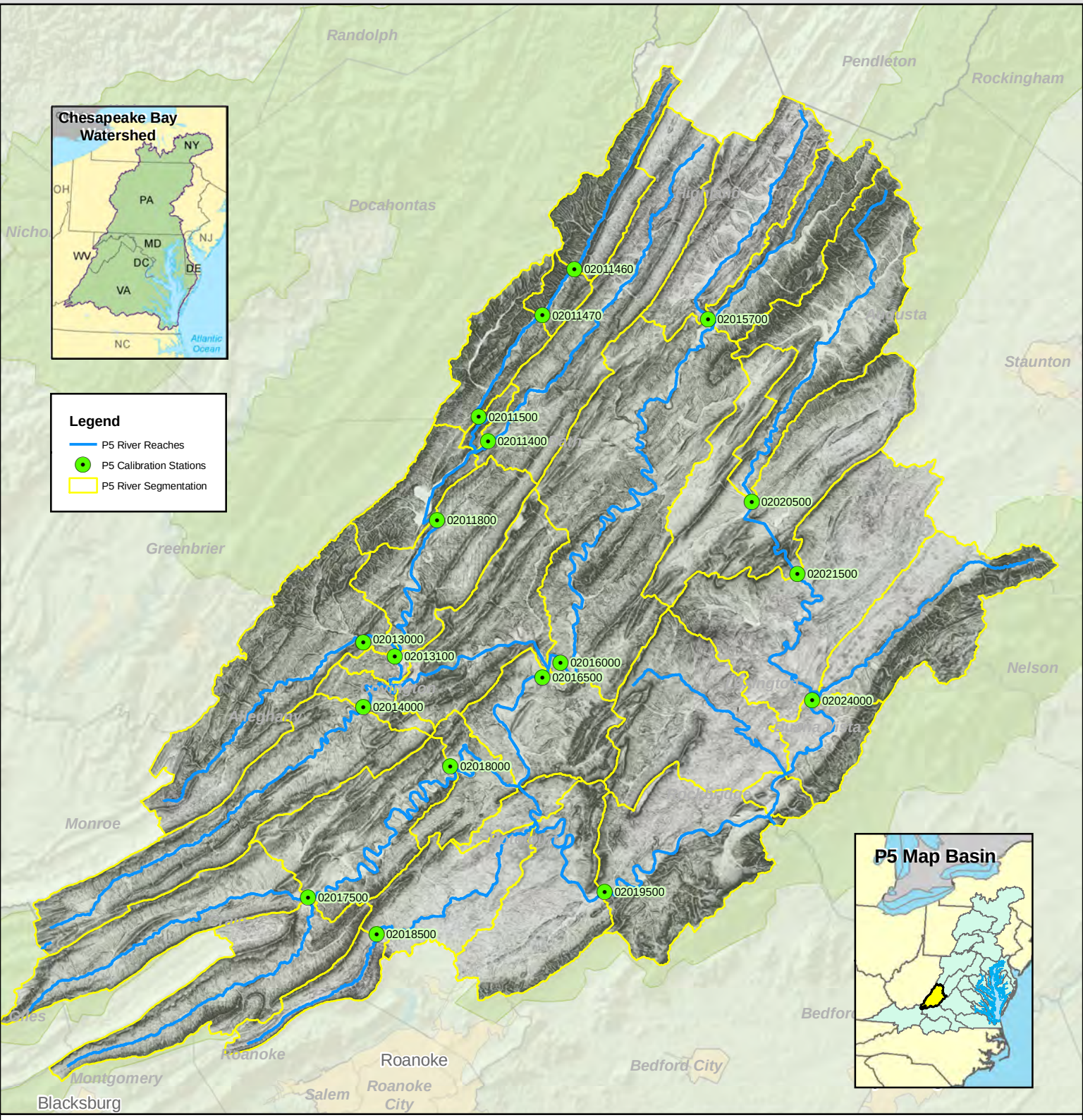

Data Sources: Chesapeake Bay Program

For more information, visit *www.chesapeakebay.net*
Disclaimer: *www.chesapeakebay.net/termsofuse.htm*

0 170 340 680 Kilometers
0 140 280 560 Miles
N

Created by KJH and JG, 9/18/08

UTM Zone 18N, NAD 83

Phase 5.1 Watershed Model

Map Basin 8. Upper James River
Phase 5.1 Base Land Cover (2000)

Chesapeake Bay Program
A Watershed Partnership

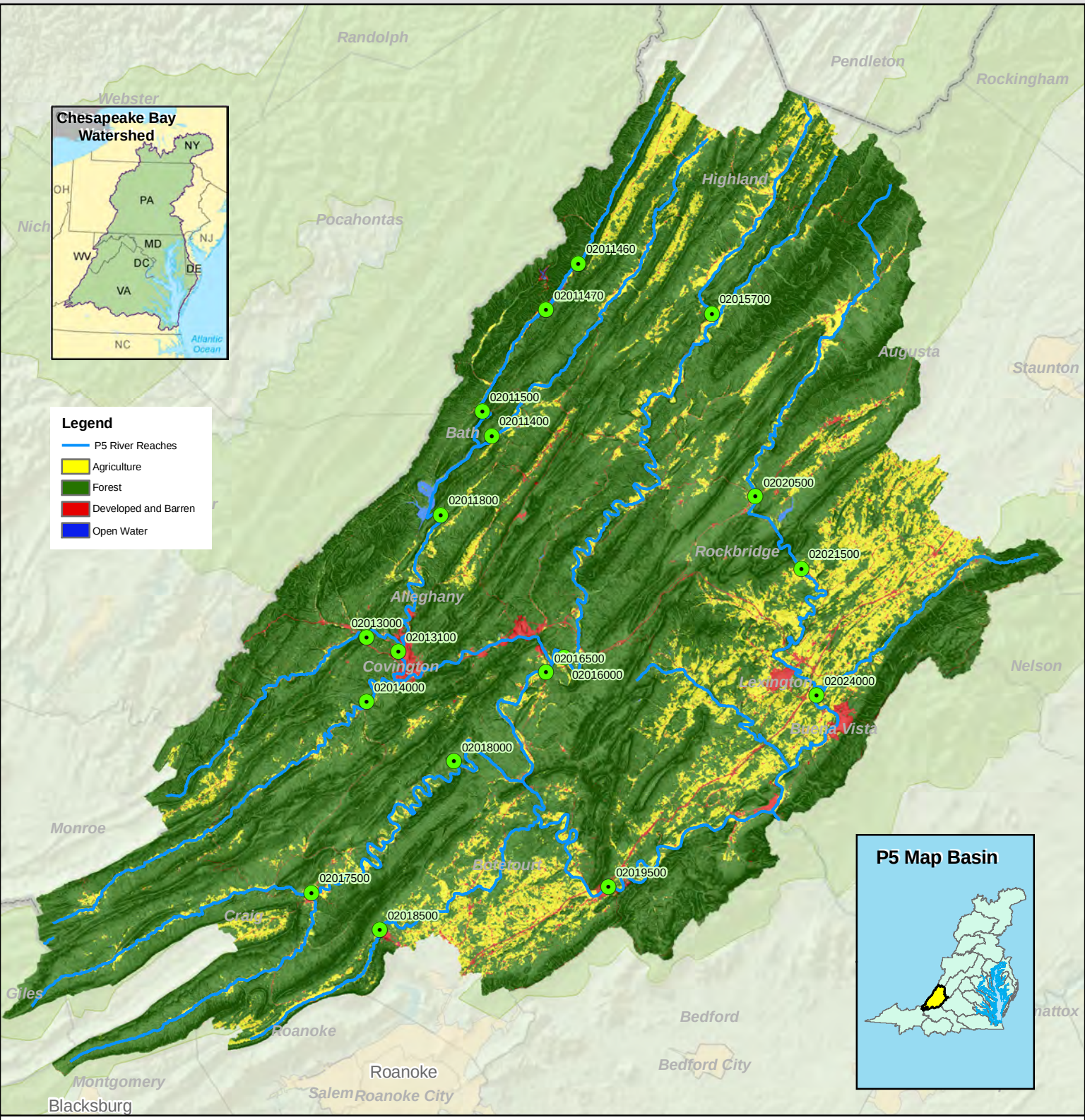

Data Sources: Chesapeake Bay Program

For more information, visit *www.chesapeakebay.net*
Disclaimer: *www.chesapeakebay.net/termsofuse.htm*

0 195 390 780 Kilometers
0 150 300 600 Miles
N

Created by KJH and JG, 9/23/08

UTM Zone 18N, NAD 83

Phase 5.1 Watershed Model

Map Basin 9. Lower James and Appomattox River

Calibration Stations, Reaches, and River Segmentation

Chesapeake Bay Program
A Watershed Partnership

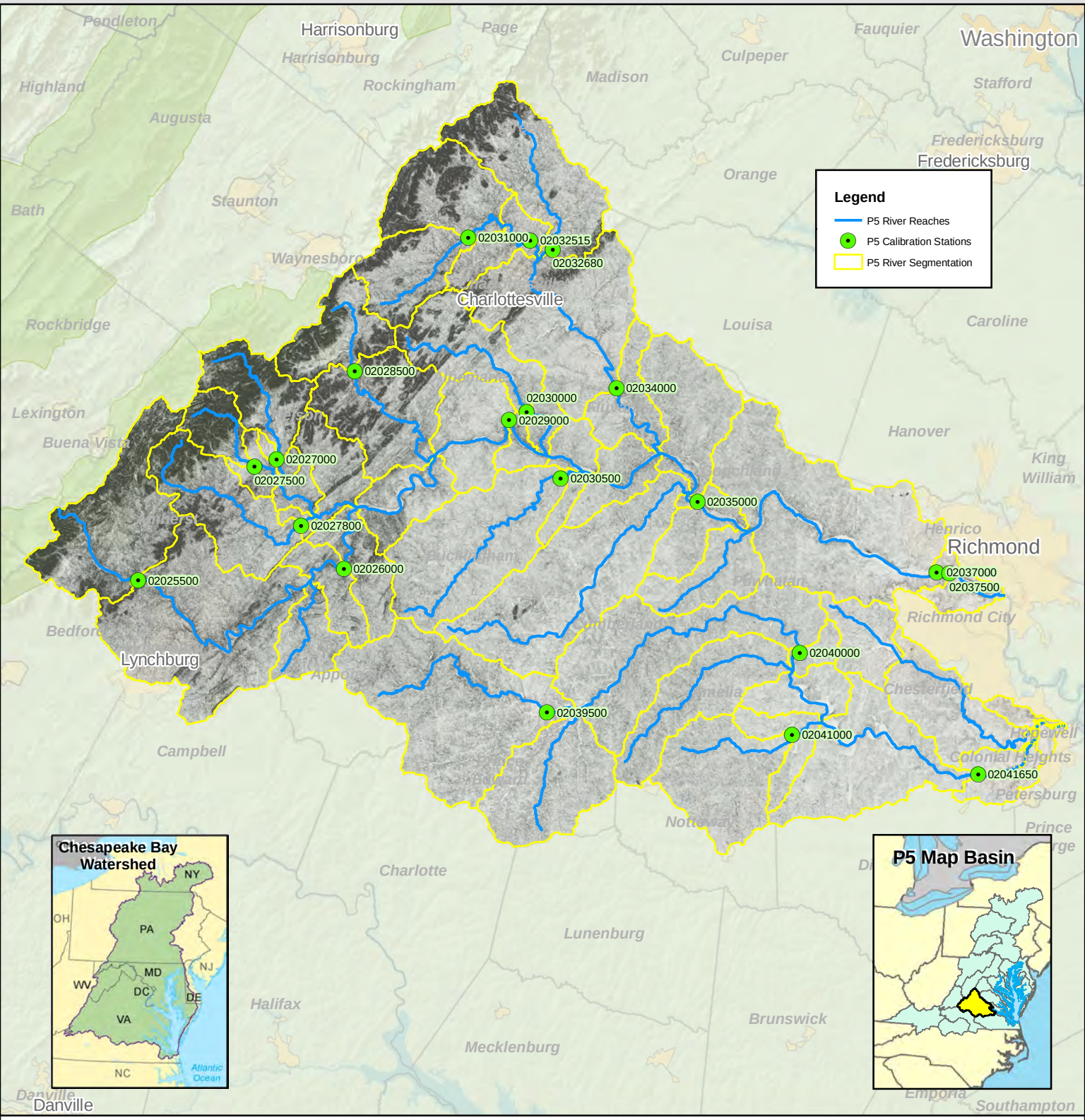

Data Sources: Chesapeake Bay Program

For more information, visit *www.chesapeakebay.net*
Disclaimer: *www.chesapeakebay.net/termsofuse.htm*

Created by KJH and JG, 9/18/08

UTM Zone 18N, NAD 83

Phase 5.1 Watershed Model

Map Basin 9. Lower James and Appomattox Rivers
Phase 5.1 Base Land Cover (2000)

Chesapeake Bay Program
A Watershed Partnership

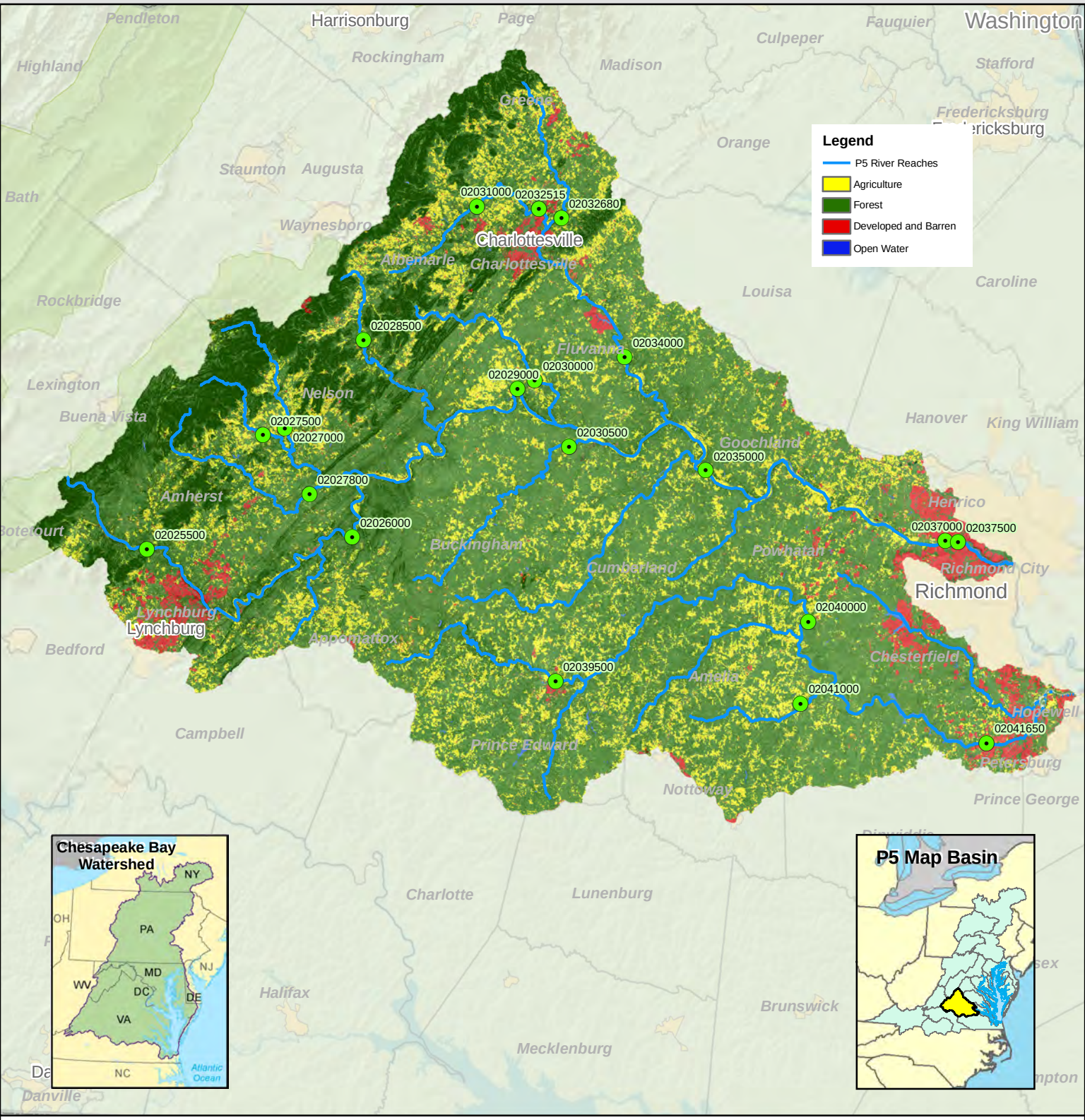

Data Sources: Chesapeake Bay Program

For more information, visit *www.chesapeakebay.net*
Disclaimer: *www.chesapeakebay.net/termsofuse.htm*

0 195 390 780 Kilometers
0 150 300 600 Miles
N

Created by KJH and JG, 9/24/08

UTM Zone 18N, NAD 83

Phase 5.1 Watershed Model

Map Basin 10. The Lower James, Meherin and Nottoway Rivers

Calibration Stations, Reaches, and River Segmentation

Chesapeake Bay Program
A Watershed Partnership

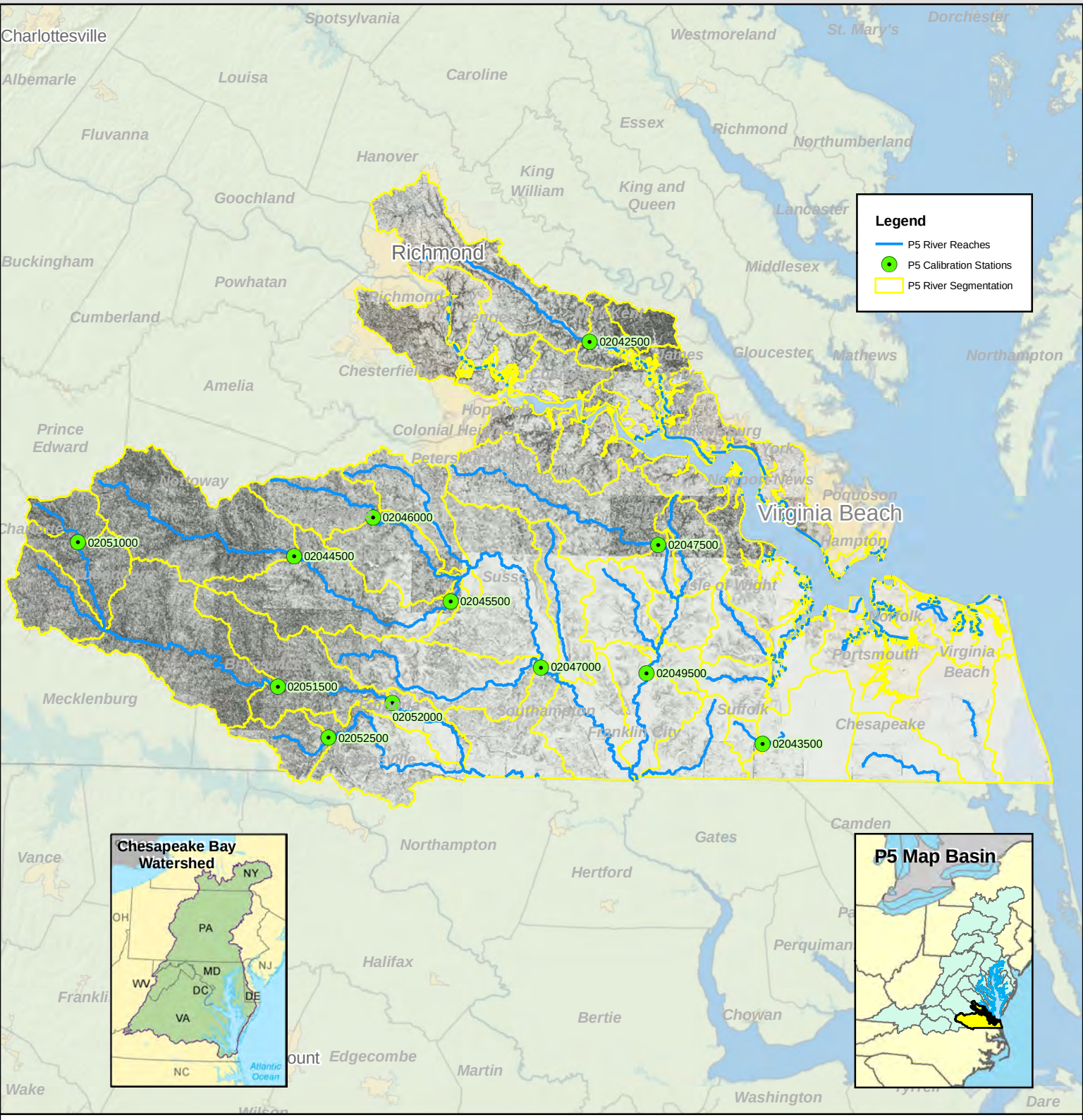

Data Sources: Chesapeake Bay Program

For more information, visit *www.chesapeakebay.net*
Disclaimer: *www.chesapeakebay.net/termsofuse.htm*

0 175 350 700 Kilometers

0 137.5 275 550 Miles

N

Created by KJH and JG, 9/18/08

UTM Zone 18N, NAD 83

Phase 5.1 Watershed Model

Map Basin 10. The James, Meherin and Nottoway Rivers
Phase 5.1 Base Land Cover (2000)

Chesapeake Bay Program
A Watershed Partnership

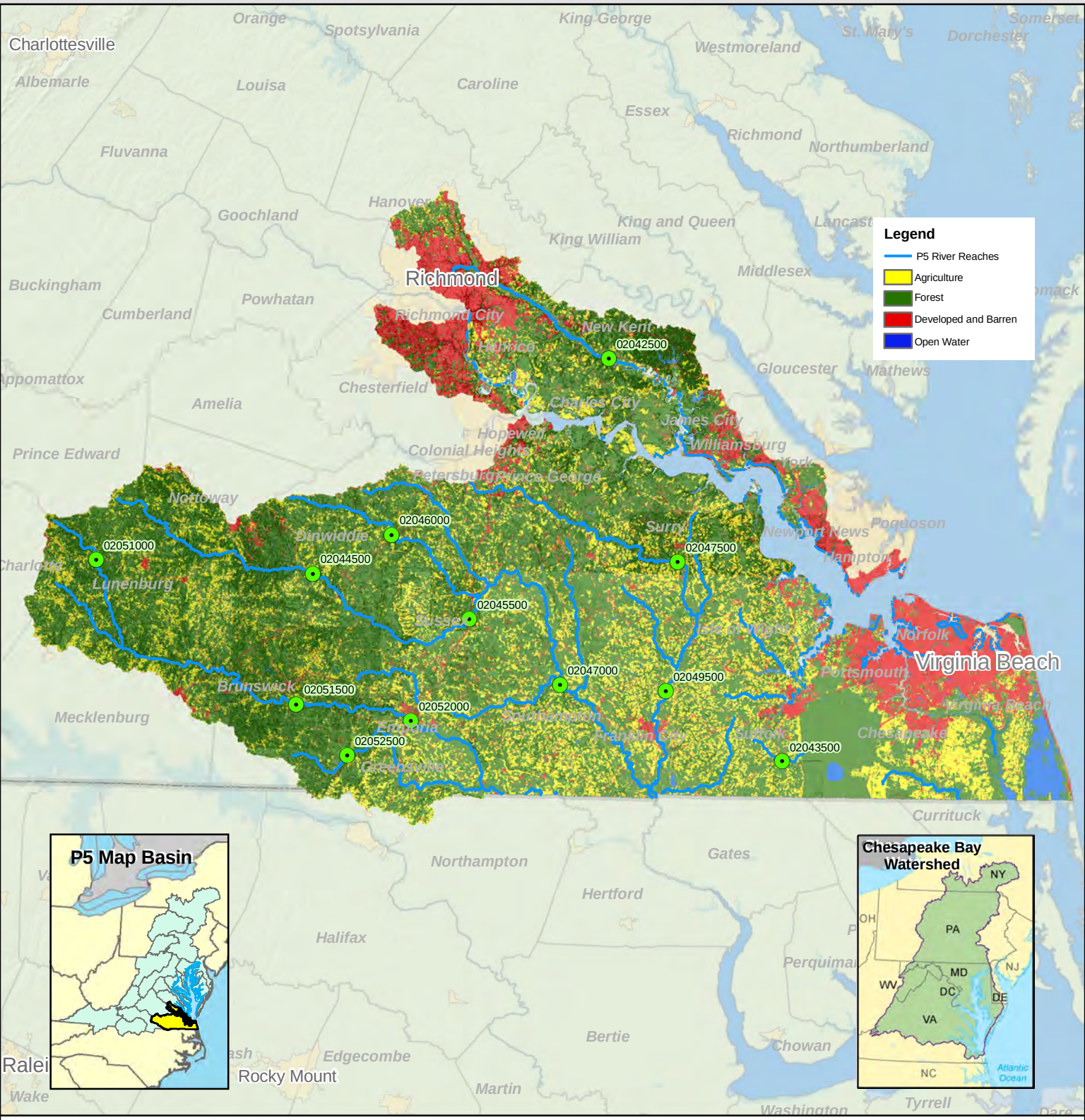

Data Sources: Chesapeake Bay Program

For more information, visit *www.chesapeakebay.net*
Disclaimer: *www.chesapeakebay.net/termsofuse.htm*

0 187.5 375 750 Kilometers
0 150 300 600 Miles
N

Created by KJH and JG, 9/24/08

UTM Zone 18N, NAD 83

Phase 5.1 Watershed Model

Map Basin 11. The Mattaponi and Pamunkey Rivers

Calibration Stations, Reaches, and River Segmentation

Chesapeake Bay Program
A Watershed Partnership

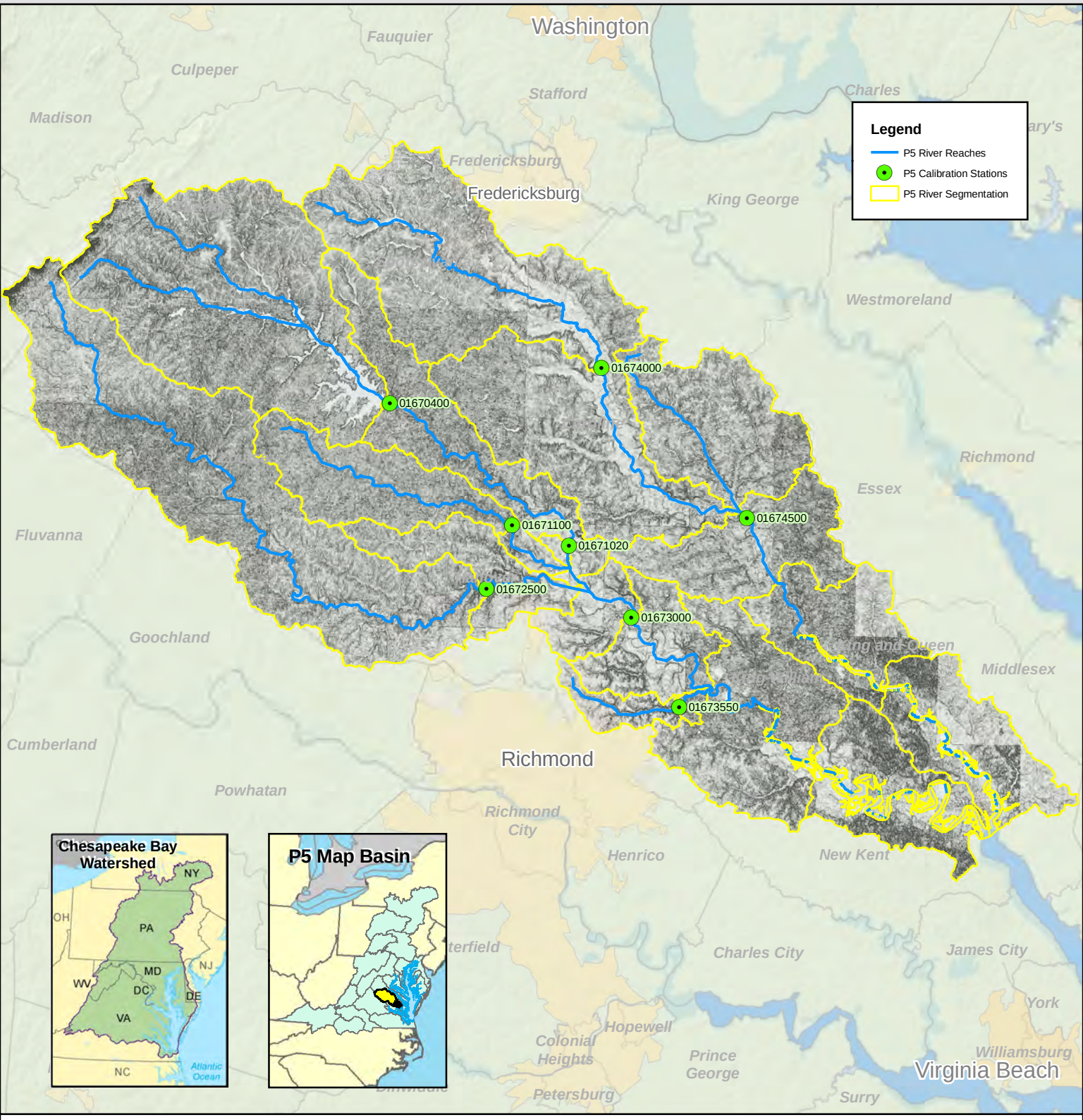

Data Sources: Chesapeake Bay Program

For more information, visit *www.chesapeakebay.net*
Disclaimer: *www.chesapeakebay.net/termsofuse.htm*

0 175 350 700 Kilometers
0 140 280 560 Miles
N

Created by KJH and JG, 9/18/08

UTM Zone 18N, NAD 83

Phase 5.1 Watershed Model

Map Basin 11. The Mattaponi and Pamunkey Rivers
Phase 5.1 Base Land Cover (2000)

Chesapeake Bay Program
A Watershed Partnership

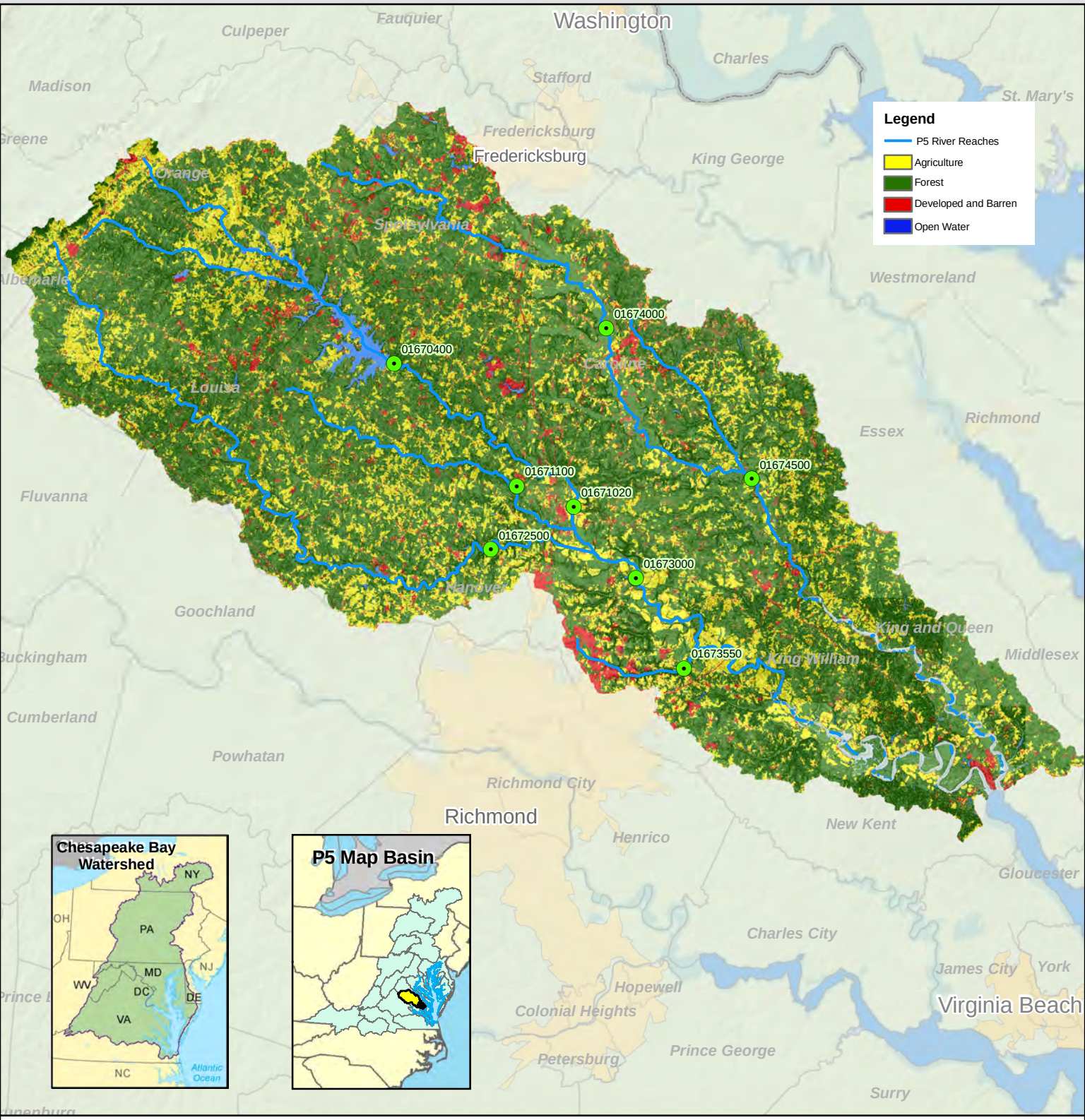

Data Sources: Chesapeake Bay Program

For more information, visit *www.chesapeakebay.net*
Disclaimer: *www.chesapeakebay.net/termsofuse.htm*

0 195 390 780 Kilometers
0 150 300 600 Miles
N

Created by KJH and JG, 9/24/08

UTM Zone 18N, NAD 83

Phase 5.1 Watershed Model

Map Basin 12. The York and Piankatank Rivers and Mobjack Bay
Calibration Stations, Reaches, and River Segmentation

Chesapeake Bay Program
A Watershed Partnership

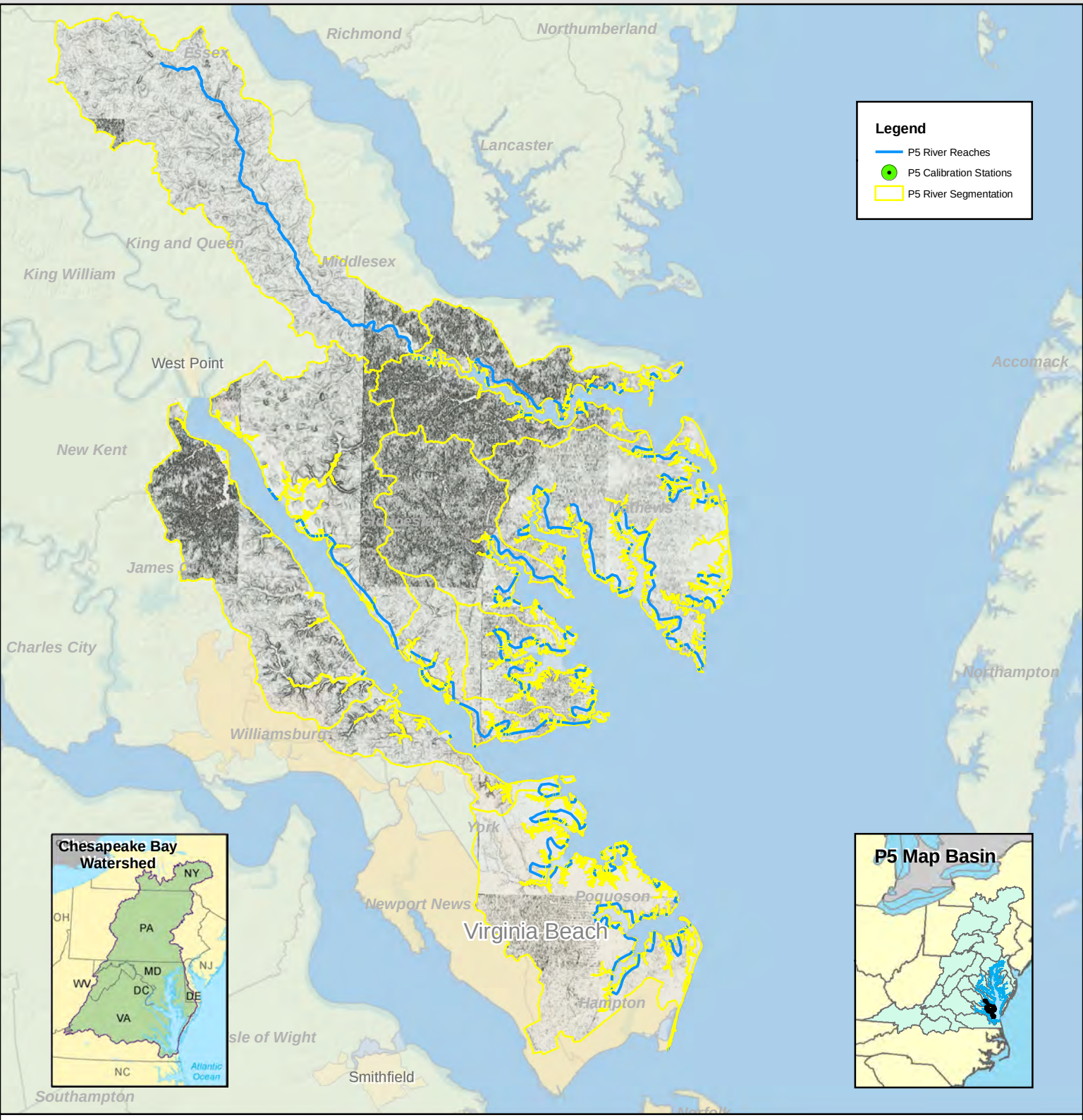

Data Sources: Chesapeake Bay Program

For more information, visit *www.chesapeakebay.net*
Disclaimer: *www.chesapeakebay.net/termsofuse.htm*

0 185 370 740 Kilometers
0 150 300 600 Miles
N

Created by KJH and JG, 9/18/08

UTM Zone 18N, NAD 83

Phase 5.1 Watershed Model

Map Basin 12. The York and Piankatank Rivers and Mobjack Bay

Phase 5.1 Base Land Cover (2000)

Chesapeake Bay Program
A Watershed Partnership

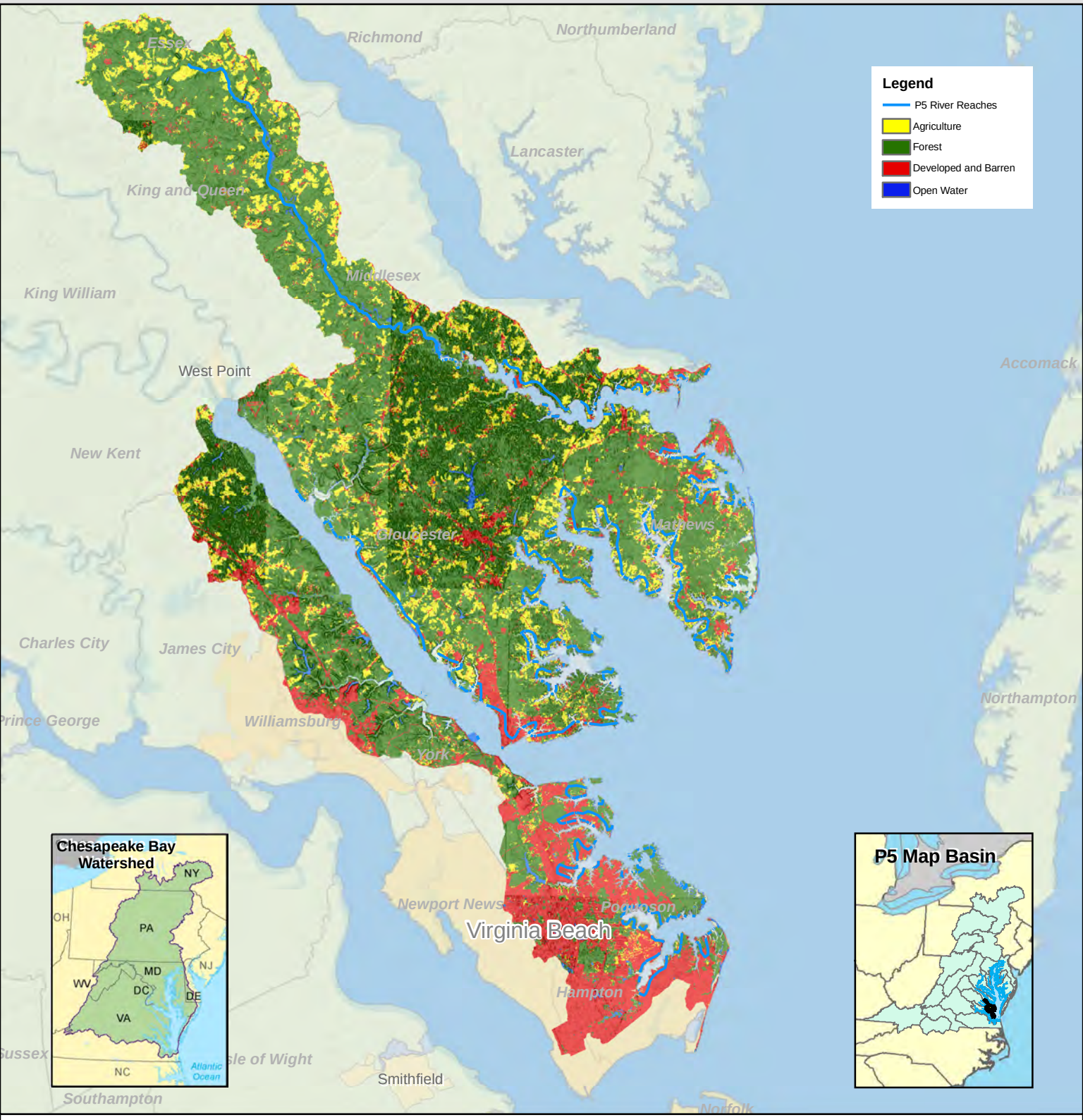

Data Sources: Chesapeake Bay Program

For more information, visit *www.chesapeakebay.net*
Disclaimer: *www.chesapeakebay.net/termsofuse.htm*

0 195 390 780 Kilometers

0 150 300 600 Miles

N

Created by KJH and JG, 9/23/08

UTM Zone 18N, NAD 83

Phase 5.1 Watershed Model

Map Basin 13. The Rappahannock River

Calibration Stations, Reaches, and River Segmentation

Chesapeake Bay Program
A Watershed Partnership

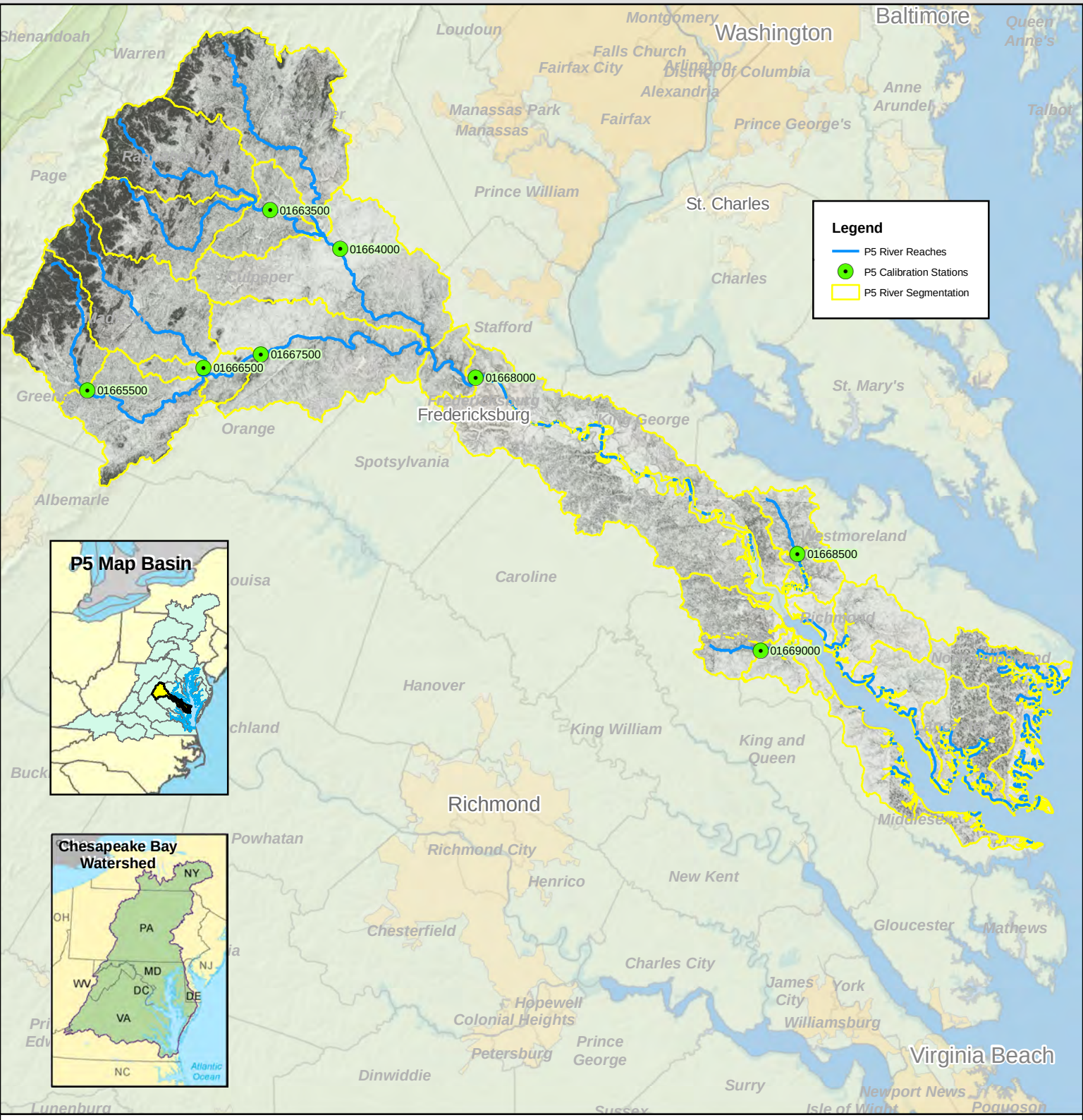

Data Sources: Chesapeake Bay Program

For more information, visit *www.chesapeakebay.net*
Disclaimer: *www.chesapeakebay.net/termsofuse.htm*

0 187.5 375 750 Kilometers
0 155 310 620 Miles
N

Created by KJH and JG, 9/18/08

UTM Zone 18N, NAD 83

Phase 5.1 Watershed Model

Map Basin 13. The Rappahannock River
Phase 5.1 Base Land Cover (2000)

Chesapeake Bay Program
A Watershed Partnership

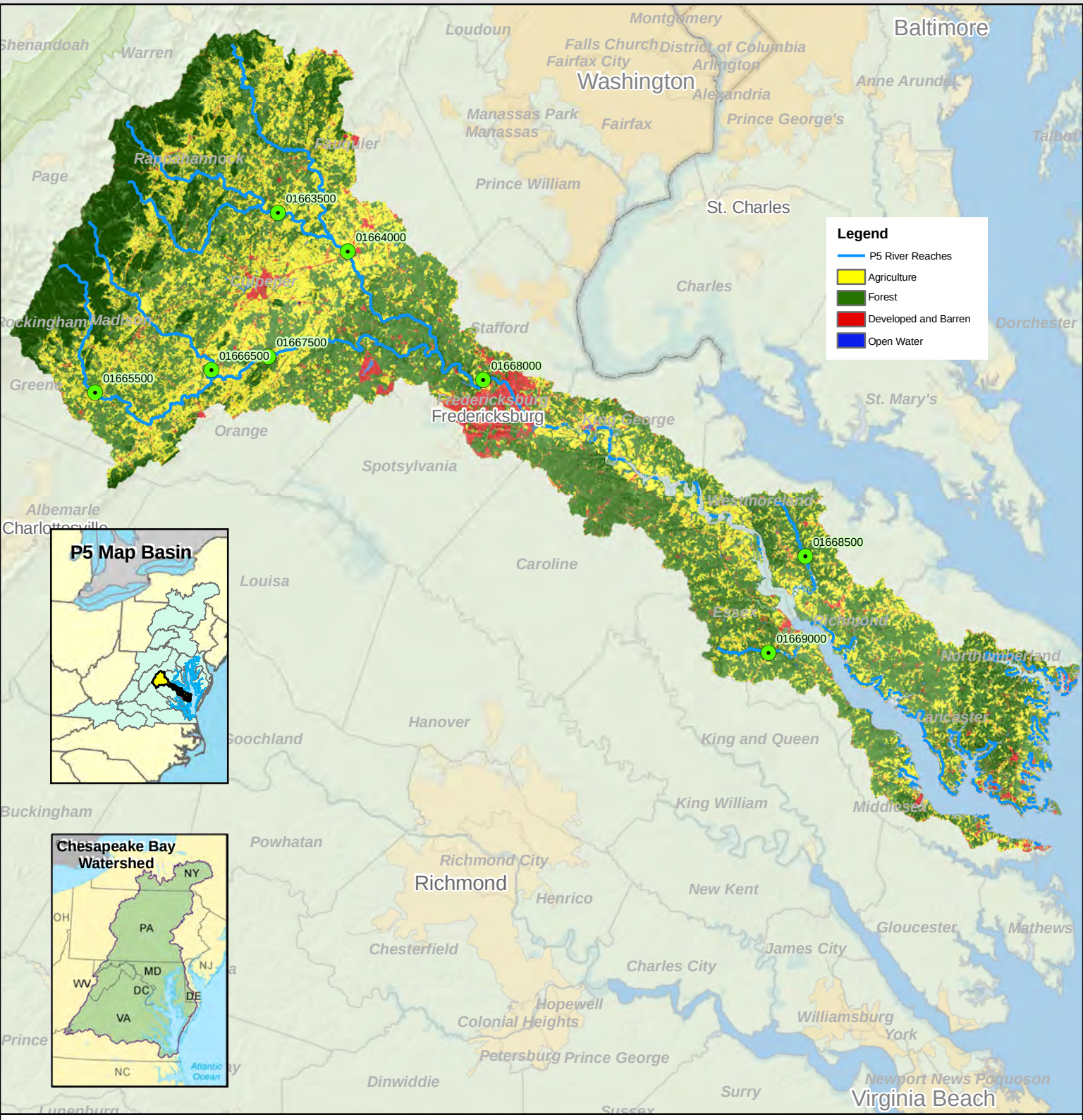

Data Sources: Chesapeake Bay Program

For more information, visit *www.chesapeakebay.net*
Disclaimer: *www.chesapeakebay.net/termsofuse.htm*

0 187.5 375 750 Kilometers
0 150 300 600 Miles
N

Created by KJH and JG, 9/26/08

UTM Zone 18N, NAD 83

Phase 5.1 Watershed Model

Map Basin 14. The Maryland Western Shore, Upper Patapsco and Patuxent Rivers

Calibration Stations, Reaches, and River Segmentation

Chesapeake Bay Program
A Watershed Partnership

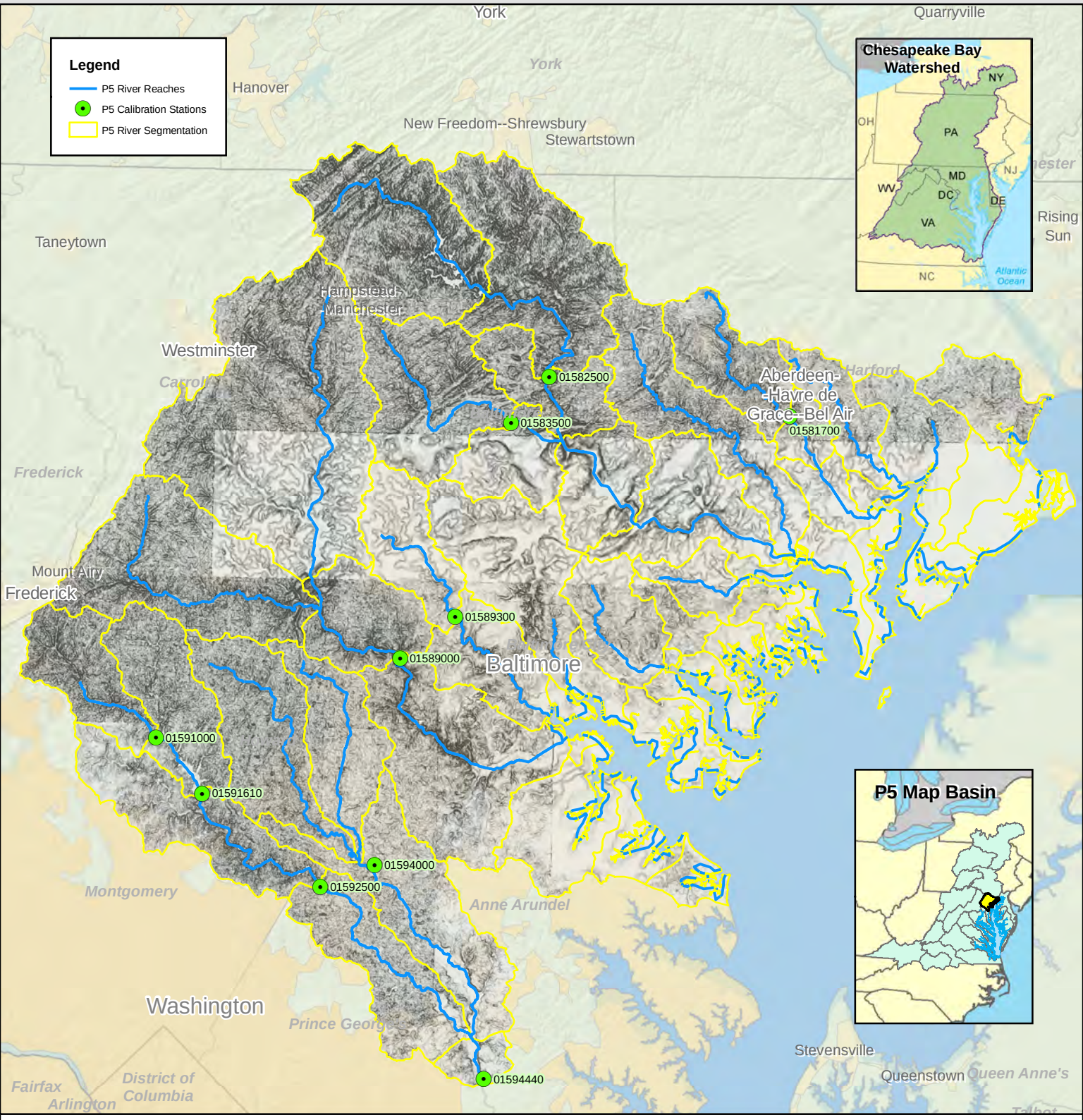

Data Sources: Chesapeake Bay Program

For more information, visit *www.chesapeakebay.net*
Disclaimer: *www.chesapeakebay.net/termsofuse.htm*

0 185 370 740 Kilometers

0 150 300 600 Miles

N

Created by KJH and JG, 9/18/08

UTM Zone 18N, NAD 83

Phase 5.1 Watershed Model

Map Basin 14. The Maryland Western Shore, Upper Patapsco and Patuxent Rivers

Phase 5.1 Base Land Cover (2000)

Chesapeake Bay Program
A Watershed Partnership

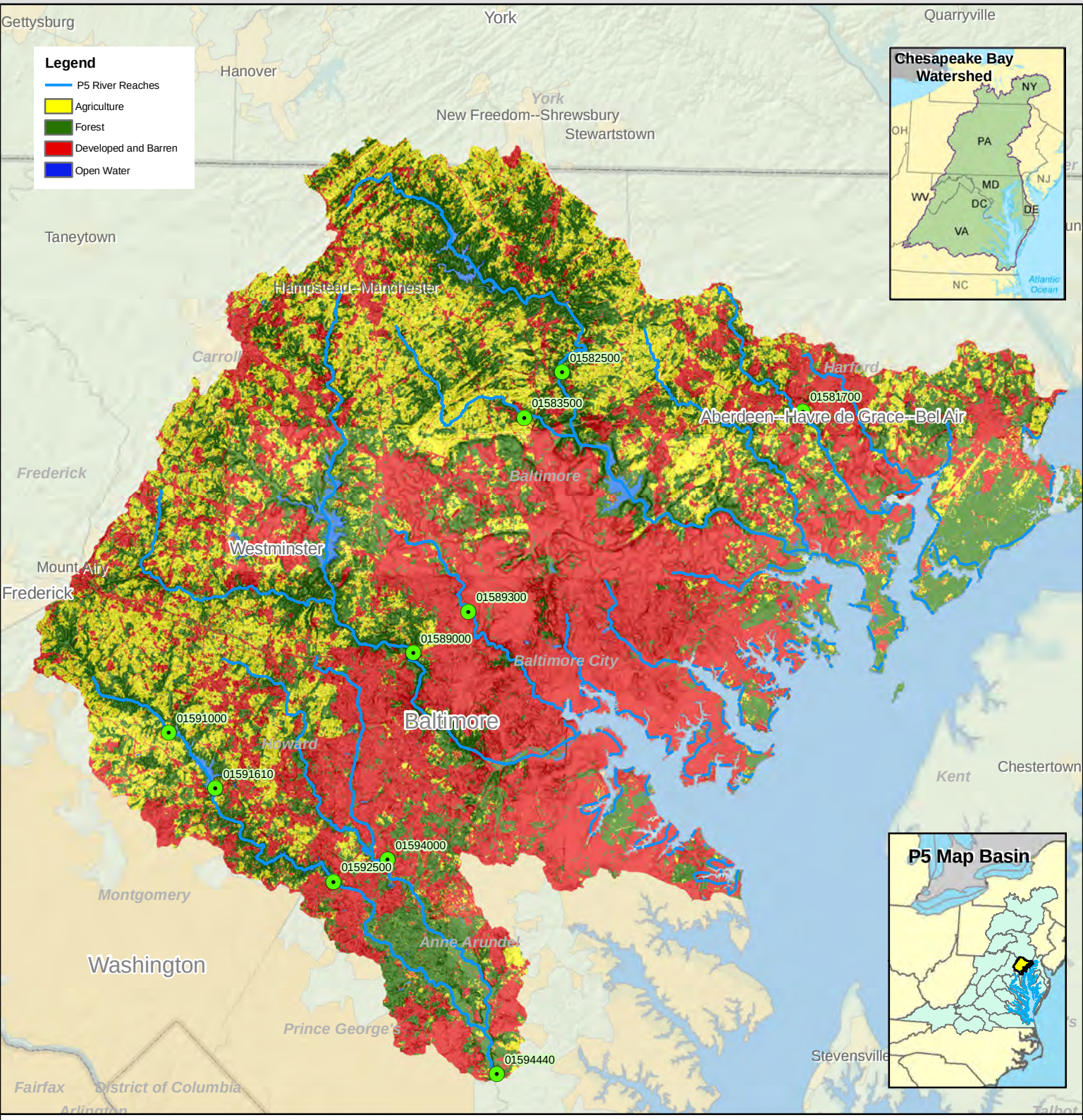

Data Sources: Chesapeake Bay Program

For more information, visit *www.chesapeakebay.net*
Disclaimer: *www.chesapeakebay.net/termsofuse.htm*

0 187.5 375 750 Kilometers

0 150 300 600 Miles

N

Created by KJH and JG, 7/30/08

UTM Zone 18N, NAD 83

Phase 5.1 Watershed Model

Map Basin 15. Upper Eastern Shore, Chesapeake and Atlantic Shore Delmarva Peninsula
Calibration Stations, Reaches, and River Segmentation

Chesapeake Bay Program
A Watershed Partnership

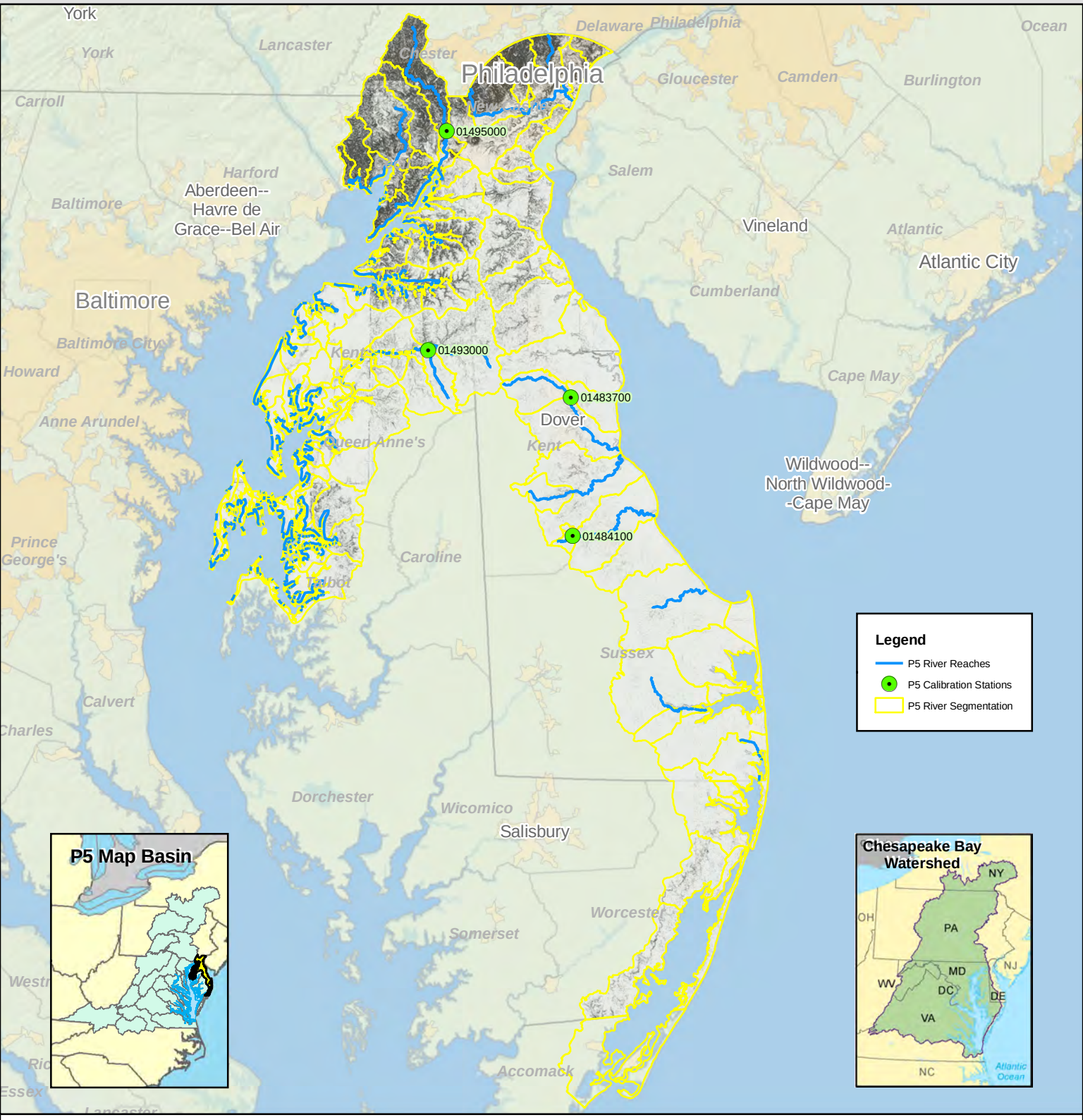

Data Sources: Chesapeake Bay Program

For more information, visit *www.chesapeakebay.net*
Disclaimer: *www.chesapeakebay.net/termsofuse.htm*

0 185 370 740 Kilometers
0 150 300 600 Miles
N

Created by KJH and JG, 9/19/08

UTM Zone 18N, NAD 83

Phase 5.1 Watershed Model

Map Basin 15. Upper Eastern Shore, Chesapeake and Atlantic Shore Delmarva Peninsula

Phase 5.1 Base Land Cover (2000)

Chesapeake Bay Program
A Watershed Partnership

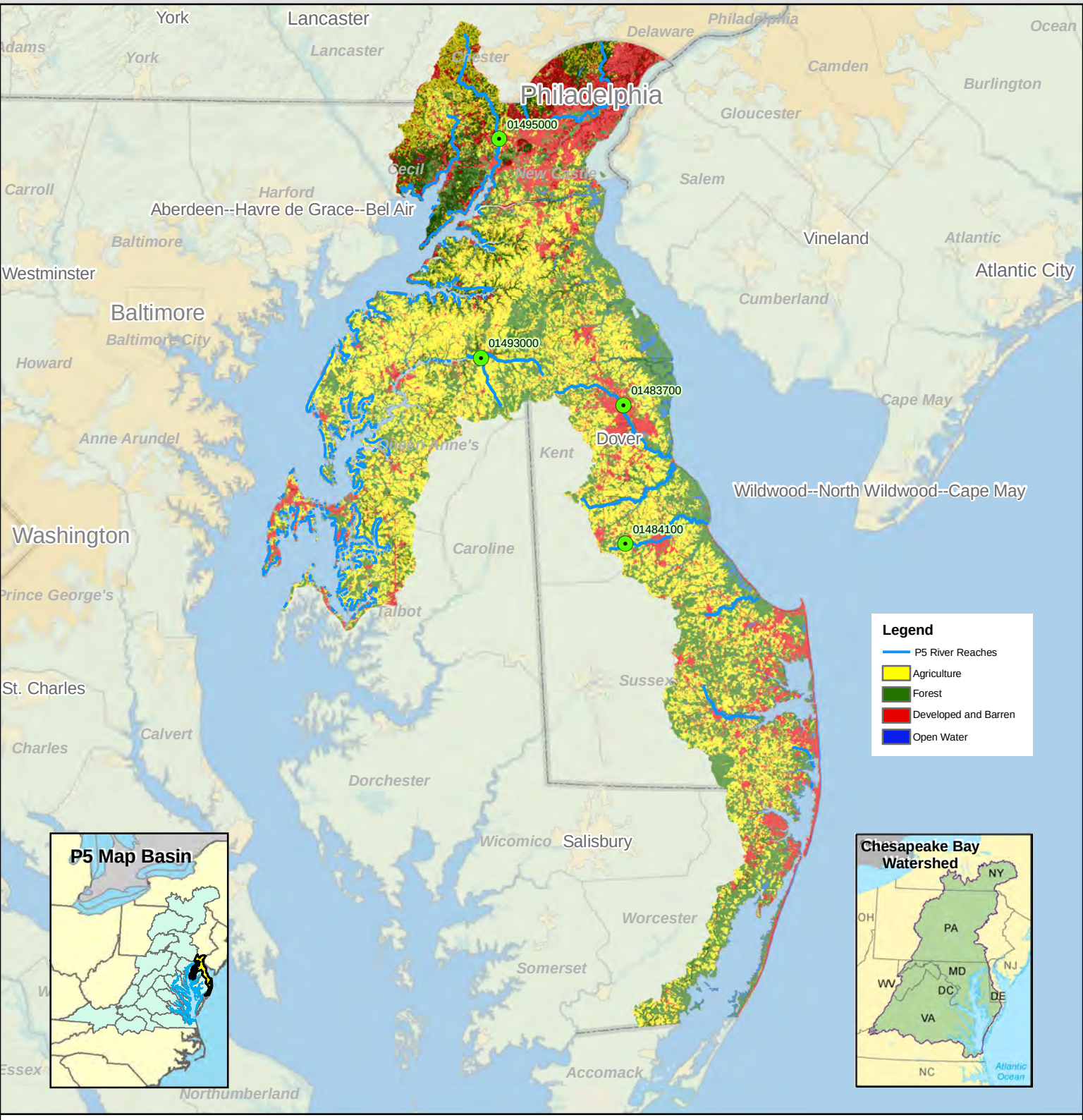

Data Sources: Chesapeake Bay Program

For more information, visit *www.chesapeakebay.net*
Disclaimer: *www.chesapeakebay.net/termsofuse.htm*

0 187.5 375 750 Kilometers

0 150 300 600 Miles

N

Created by KJH and JDG, 9/23/08

UTM Zone 18N, NAD 83

Phase 5.1 Watershed Model

Map Basin 16. The Lower Eastern Shore including the Choptank River and VA Atlantic Coast
Calibration Stations, Reaches, and River Segmentation

Chesapeake Bay Program
A Watershed Partnership

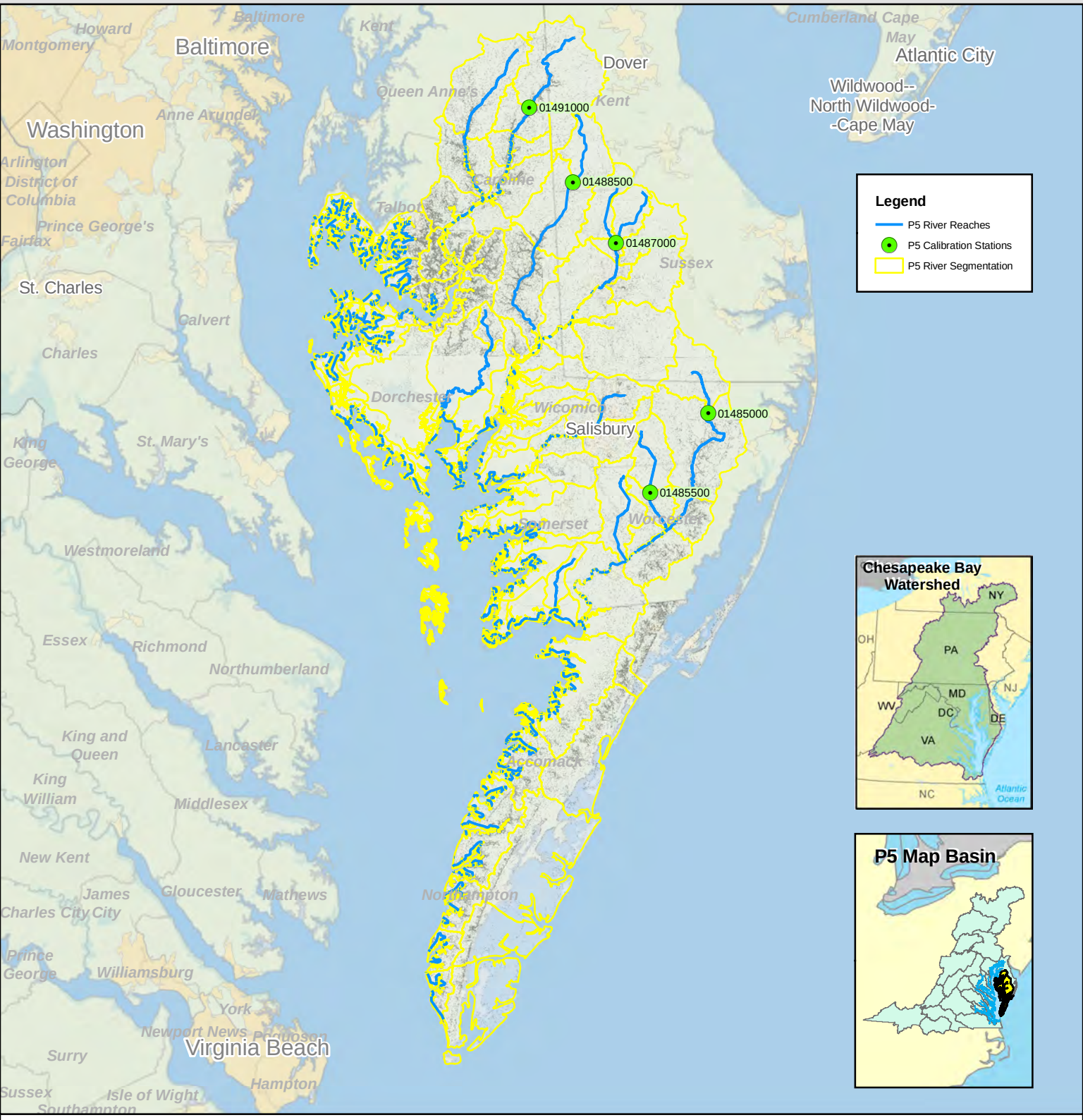

Data Sources: Chesapeake Bay Program

For more information, visit *www.chesapeakebay.net*
Disclaimer: *www.chesapeakebay.net/termsofuse.htm*

0 187.5 375 750 Kilometers
0 155 310 620 Miles
N

Created by KJH and JG, 9/19/08

UTM Zone 18N, NAD 83

Phase 5.1 Watershed Model

Map Basin 16. The Lower Eastern Shore including the Choptank River and VA Atlantic Coast
Phase 5.1 Base Land Cover (2000)

Chesapeake Bay Program
A Watershed Partnership

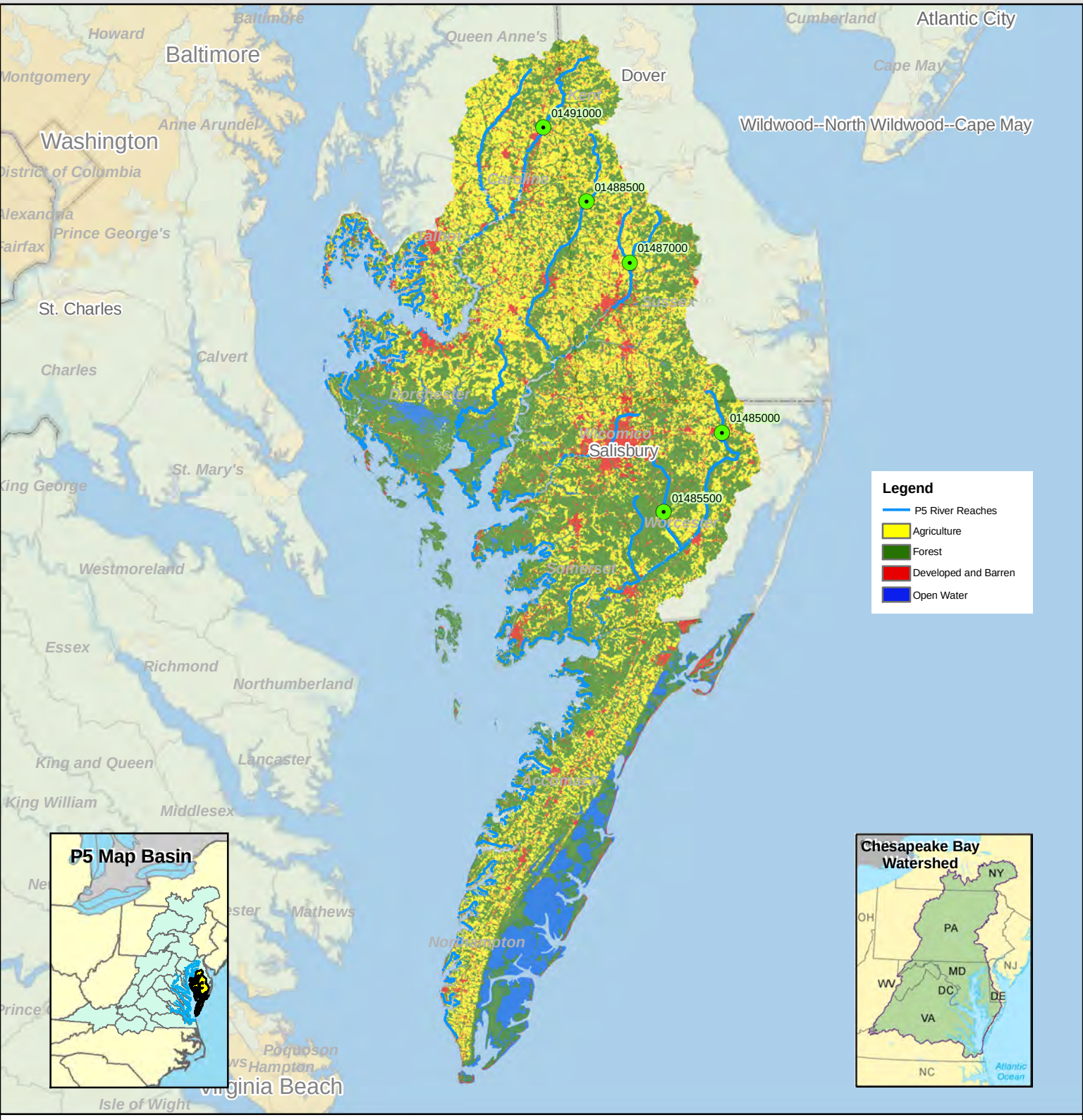

Data Sources: Chesapeake Bay Program

For more information, visit *www.chesapeakebay.net*
Disclaimer: *www.chesapeakebay.net/termsofuse.htm*

0 195 390 780 Kilometers
0 150 300 600 Miles
N

Created by KJH and JDG, 9/23/08

UTM Zone 18N, NAD 83

Phase 5.1 Watershed Model

Map Basin 17. The Big Sandy, New, and Upper Tennessee Rivers

Calibration Stations, Reaches, and River Segmentation

Chesapeake Bay Program
A Watershed Partnership

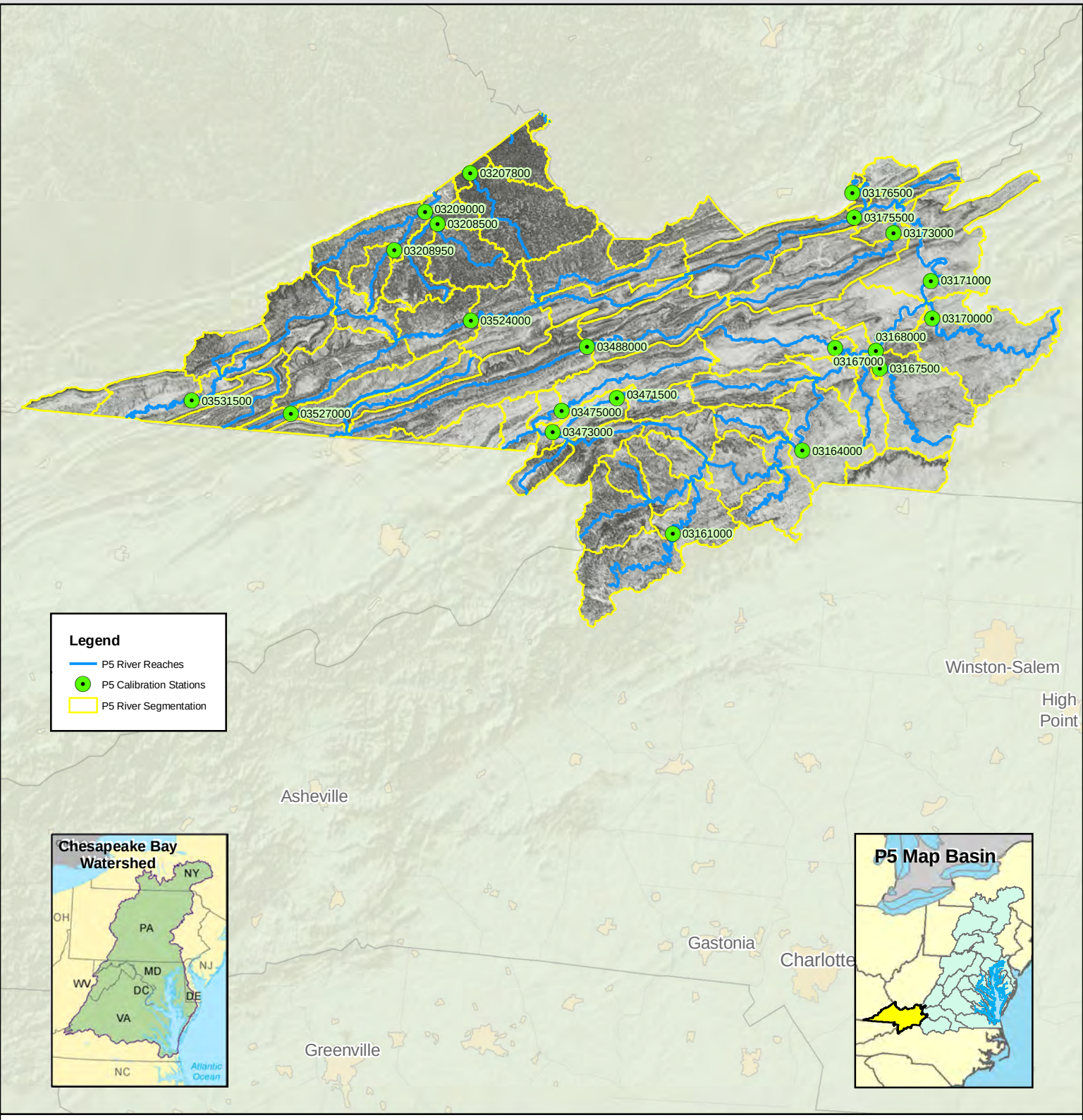

Data Sources: Chesapeake Bay Program

For more information, visit *www.chesapeakebay.net*
Disclaimer: *www.chesapeakebay.net/termsofuse.htm*

0 190 380 760 Kilometers
0 155 310 620 Miles
N

Created by KJH and JG, 9/19/08

UTM Zone 18N, NAD 83

Phase 5.1 Watershed Model

Map Basin 17. The Big Sandy, New, and Upper Tennessee Rivers
Phase 5.1 Base Land Cover (2000)

Chesapeake Bay Program
A Watershed Partnership

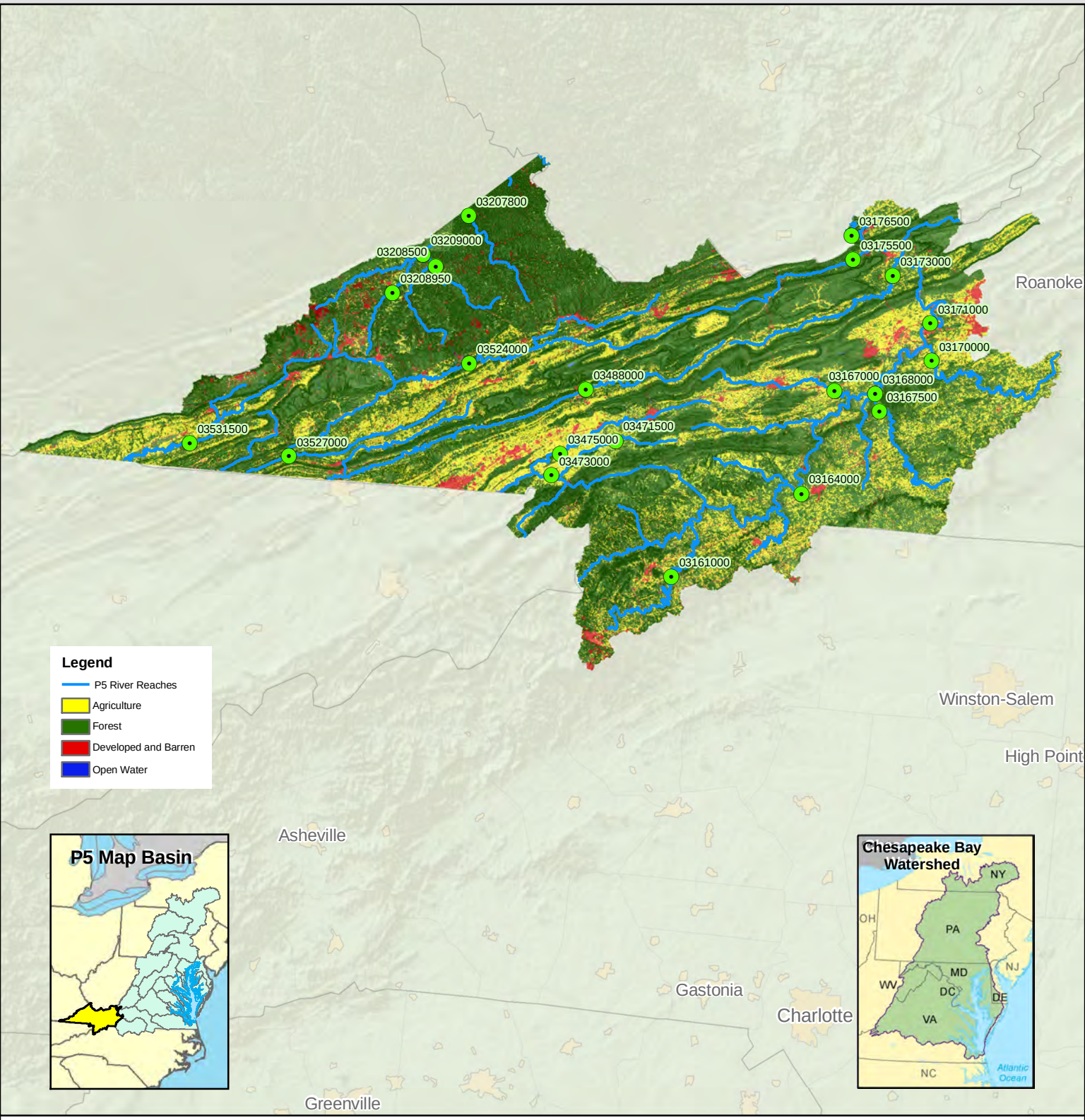

Data Sources: Chesapeake Bay Program

For more information, visit *www.chesapeakebay.net*
Disclaimer: *www.chesapeakebay.net/termsofuse.htm*

0 187.5 375 750 Kilometers
0 150 300 600 Miles
N

Created by KJH and JDG, 9/23/08

UTM Zone 18N, NAD 83

Phase 5.1 Watershed Model

Map Basin 18. The Dan River (tributary of the Roanoke River)

Calibration Stations, Reaches, and River Segmentation

Chesapeake Bay Program
A Watershed Partnership

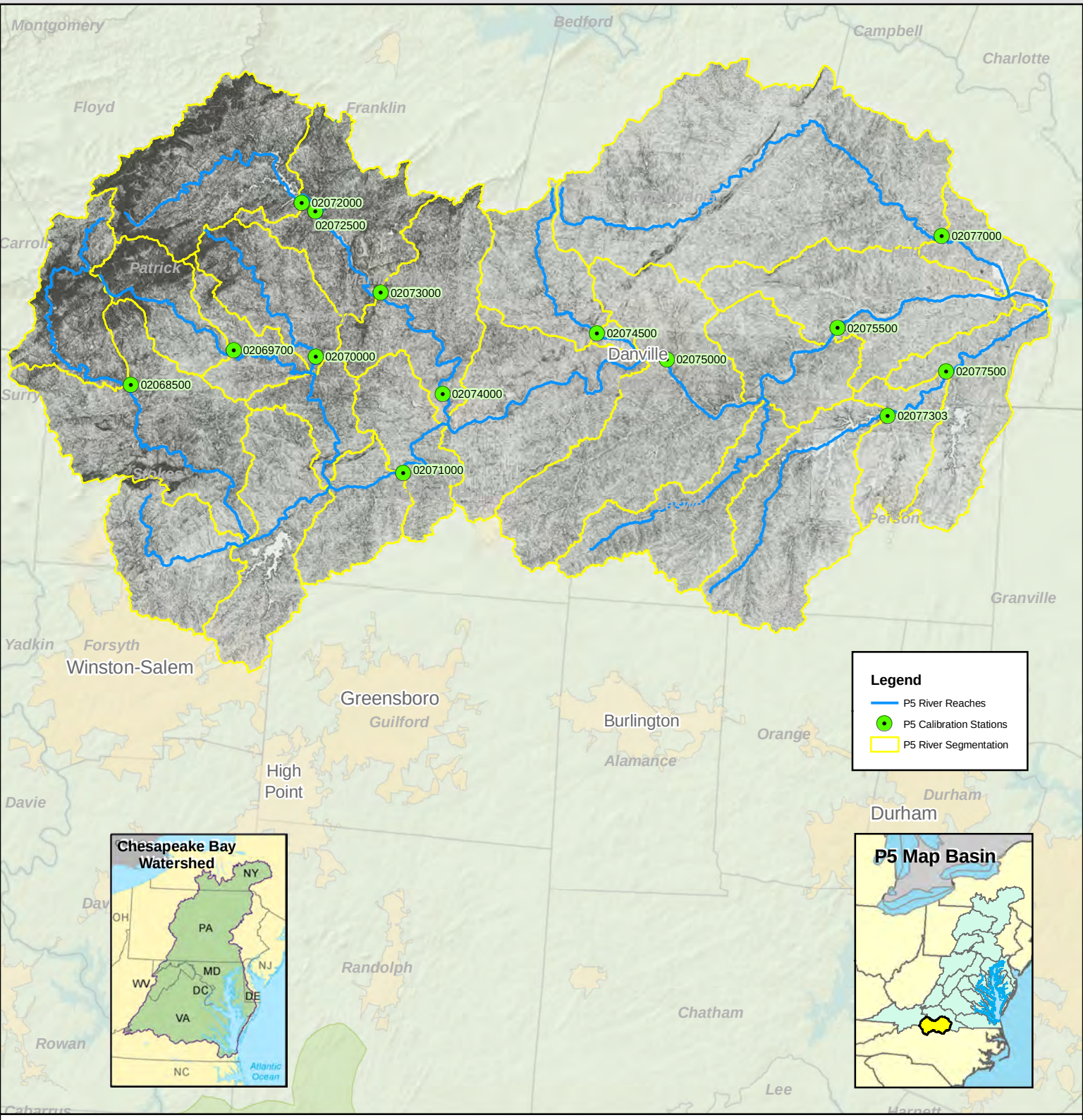

Data Sources: Chesapeake Bay Program

For more information, visit *www.chesapeakebay.net*
Disclaimer: *www.chesapeakebay.net/termsofuse.htm*

0 190 380 760 Kilometers
0 155 310 620 Miles
N

Created by KJH and JG, 9/19/08

UTM Zone 18N, NAD 83

Phase 5.1 Watershed Model

Map Basin 18. The Dan River
Phase 5.1 Base Land Cover (2000)

Chesapeake Bay Program
A Watershed Partnership

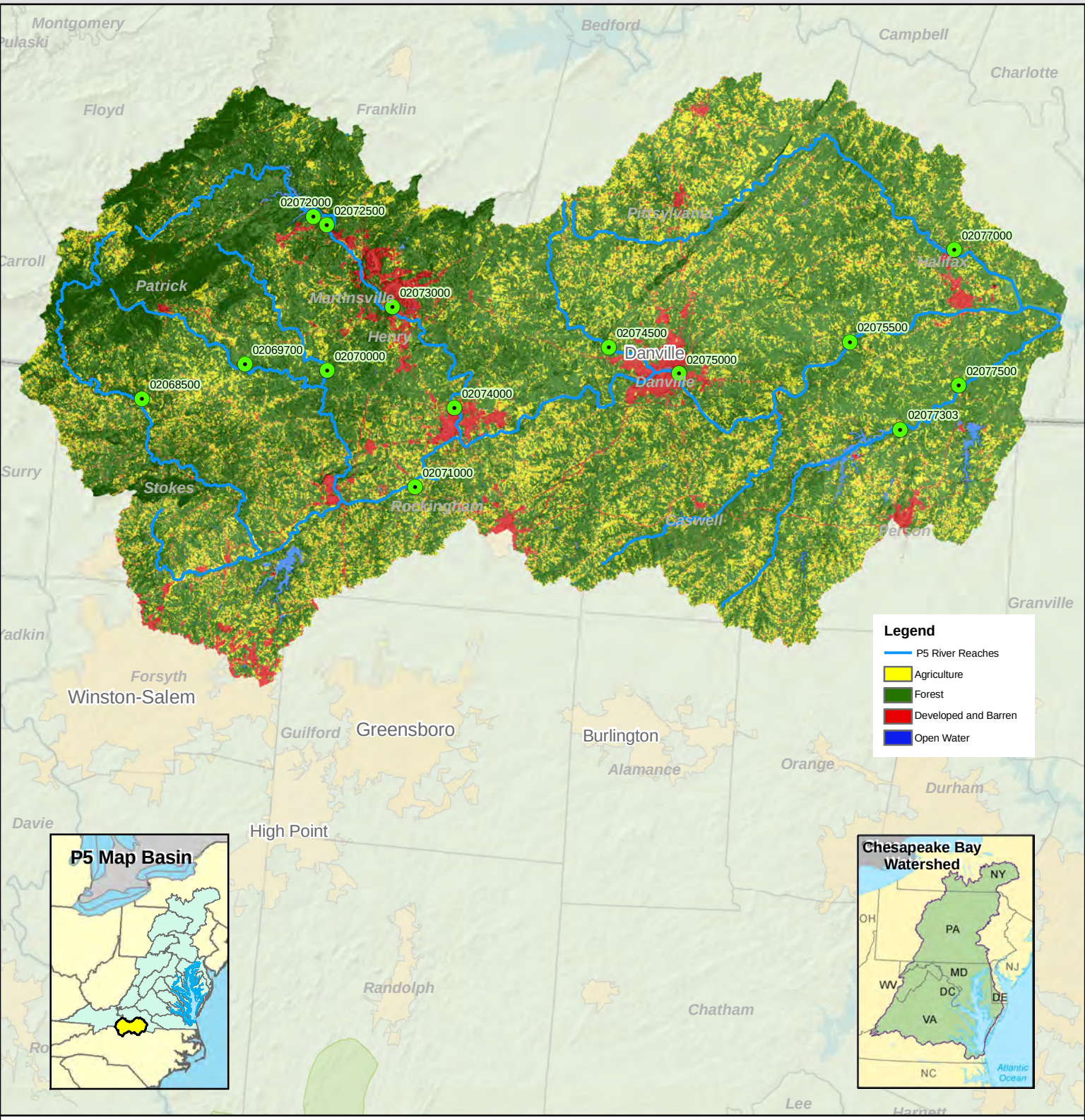

Data Sources: Chesapeake Bay Program

For more information, visit *www.chesapeakebay.net*
Disclaimer: *www.chesapeakebay.net/termsofuse.htm*

0 187.5 375 750 Kilometers
0 150 300 600 Miles
N

Created by KJH and JDG, 9/23/08

UTM Zone 18N, NAD 83